CITY OF DELAWARE
FIRE STATION 305

680 SUNBURY ROAD, DELAWARE OHIO



PREPARED FOR

CITY OF DELAWARE CITY COUNCIL

CATLIN FRAZIER
LINSEY GRIFFITH
ADAM HAYNES
CORY HOFFMAN
KEVIN RIDER

CAROLYN KAY RIGGLE, MAYOR

KENT SHAFER, VICE MAYOR

PAUL J. BRAKE, CITY MANAGER

TIM PYLE, DELAWARE FIRE CHIEF

VICINTY MAP



SCALE: N.T.S.

C:\Users\Joe Mateer\Documents\2211_DFD305_ARCH_CENTRAL_v24_mateerjoe1.rvt
2/17/2025 4:54:07 PM

PREPARED BY

CIVIL ENGINEERING
The Kleingers Group
390 worthington road, suite H, westerville, ohio 43082

STRUCTURAL ENGINEERING
Korda / Nemeth Engineering, Inc.
1650 watermark drive, suite 200, columbus, ohio 43215

MECHANICAL & ELECTRICAL ENGINEERING
Karpinski Engineering
8800 lyra drive, suite 530, columbus, ohio 43240

m&w
mull & weithman architects, inc.
4525 indianola avenue columbus, ohio 43214
p: 614-267-6660 f: 614-267-6978

SECURITY CONSULTANT
Security Risk Management Consultants, Inc.
102 w. main street, suite 8, new albany, ohio 43054

INTERIOR DESIGN / GRAPHICS
ROWE Creative Union
657 mohawk st, columbus, ohio 43206

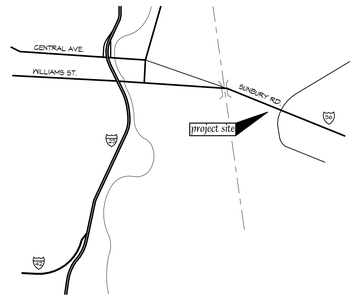
ABATEMENT CONSULATANT
August Mack Environmental
7965 north central drive, suite b, lewis center, ohio 43035

REVISONS

PROJECT STATUS

○ schematic design	4 march 2024
○ design development	30 august 2024
○ permit submittal	13 december 2024
○ construction documents	
● issued for bidding	31 january 2025

LOCATION MAP



SCALE: N.T.S.

STATE OF OHIO
JOSEPH
WEITHMAN
10152
REGISTERED ARCHITECTS

All reports, drawings, specifications, computer files, field data, notes and other documents and instruments prepared by Mull & Weithman Architects, Inc., as instruments of service shall remain the property of Mull & Weithman Architects, Inc. Mull & Weithman Architects, Inc. shall retain all common law, statutory and other reserved rights, including copyright © thereto.

Delaware Fire Station 305
680 Sunbury Road
Delaware, Ohio 43015

m&w
mull & weithman architects, inc.
4525 indianola avenue, columbus, ohio 43214
614-267-6660 614-267-6978 fax

issued for bidding
31 january 2025
commission no.2211

TS1.0



SITE PLAN
SCALE: 1" = 20'-0"

Legend	
7" exterior hd pavement with 6x6x 4 ga mesh	18,917.30 SF
Monument Sign	9.23 LF
turndown at curb & asphalt	114.99 LF

All reports, drawings, specifications, computer files, field data, notes and other documents and instruments prepared by Mull & Weithman Architects, Inc., as instruments of service shall remain the property of Mull & Weithman Architects, Inc. Mull & Weithman Architects, Inc. shall retain all common law, statutory and other reserved rights, including copyright © thereto.

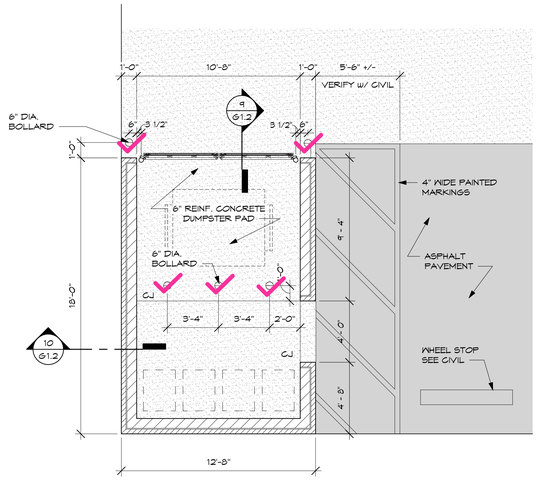
m&w
mull & weithman architects, inc.
4525 indianola avenue, columbus, ohio 43214
614-267-6960 614-267-6978 fax

Delaware Fire Station 305
680 Sunbury Road
Delaware, Ohio 43015

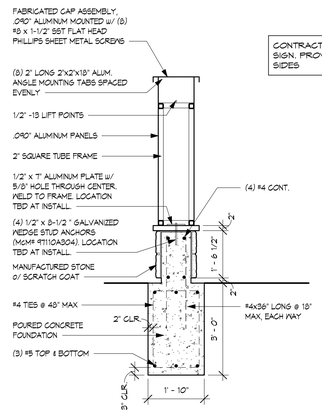
issued for bidding
31 january 2025
commission no.2.2.11

G1.1

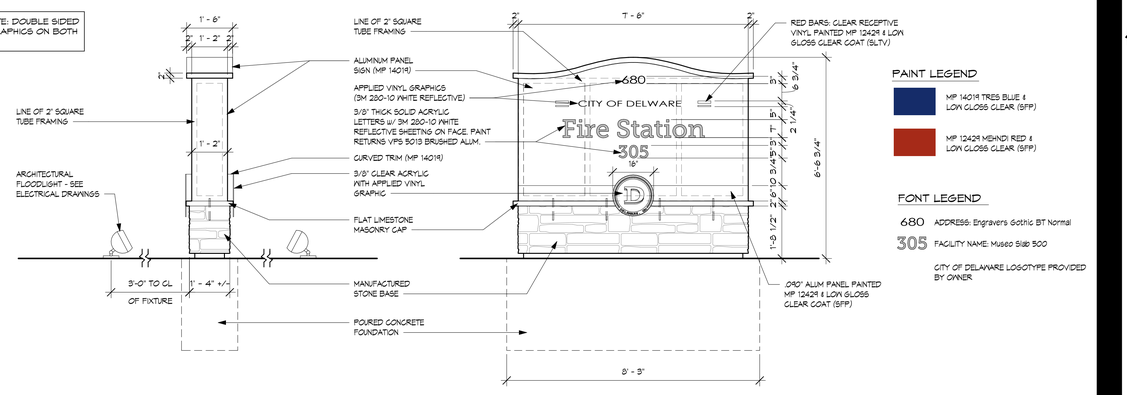
C:\Users\Joe Meisner\Documents\2211_DFD305_ARCH_CENTRAL_v24_mslimeight1.rvt
2/17/2025 4:54:18 PM



7 Dumpster Enclosure
G1.1 G1.2 SCALE: 1/4" = 1'-0"



CONTRACTOR NOTE: DOUBLE SIDED SIGN. PROVIDE GRAPHICS ON BOTH SIDES



PAINT LEGEND

- MP 14019 TRES BLUE & LOW GLOSS CLEAR (SFP)
- MP 12429 MEHNDI RED & LOW GLOSS CLEAR (SFP)

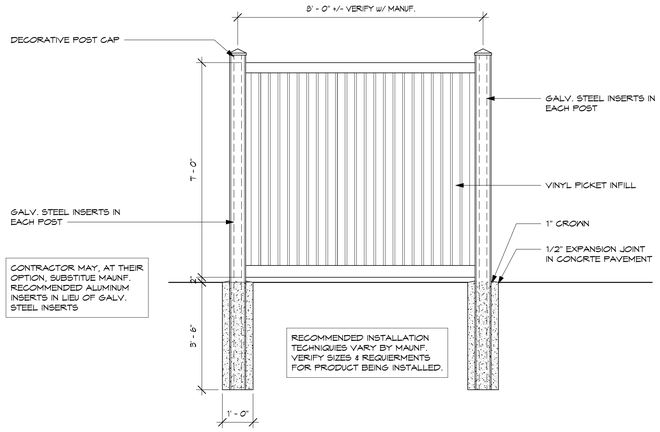
FONT LEGEND

680 ADDRESS: Engravers Gothic BT Normal

305 FACILITY NAME: Museo Slab 500

CITY OF DELAWARE LOGOTYPE PROVIDED BY OWNER

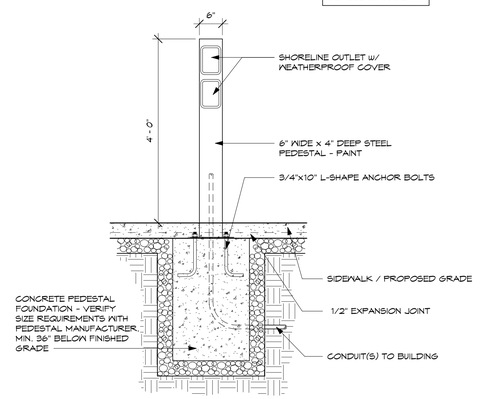
1 BUILDING SIGN
G1.1 G1.3 SCALE: 1/2" = 1'-0"



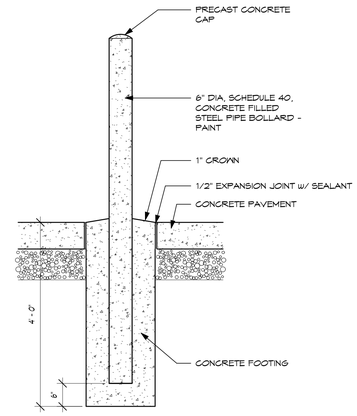
BASIS OF DESIGN PRODUCT: SUBJECT TO COMPLIANCE WITH THE REQUIERMENTS. PROVIDE POSTS, RAILS, T&G PICKETS, POST CAPS, AND ALL ACCESSORIES FROM HYDE PARK RANGE, AS MANUFACTURERED BY CERTAINTEED (BUFFTECH) COLOR TBD.

8 DETAIL: @ PATIO FENCE
G1.1 G1.2 SCALE: 1/2" = 1'-0"

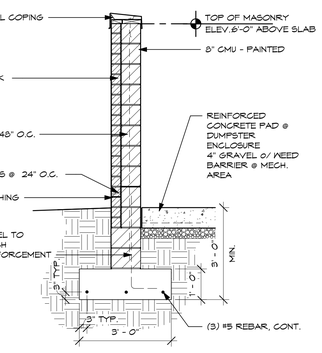
FIELD VERIFY EXACT LOCATION/SIDE OF VEHICLE w/ OWNER



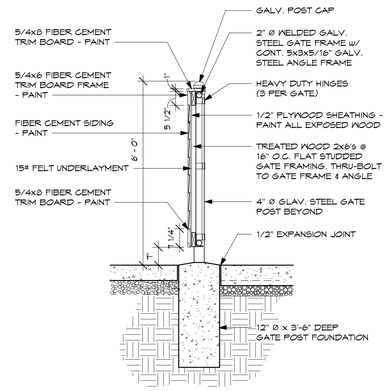
5 DETAIL @ SHORELINE PEDESTAL
G1.1 G1.2 SCALE: 3/4" = 1'-0"



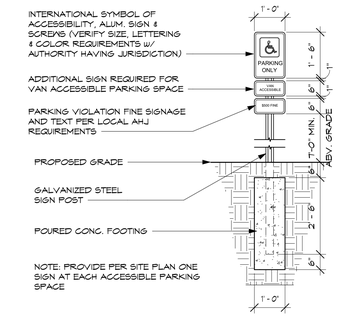
2 DETAIL @ TYPICAL BOLLARD
A5.3 G1.2 SCALE: 3/4" = 1'-0"



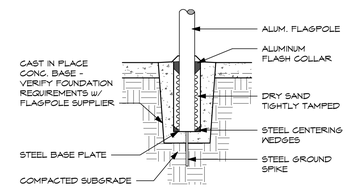
10 DETAIL @ DUMPSTER ENCLOSURE
G1.2 G1.2 SCALE: 1/2" = 1'-0"



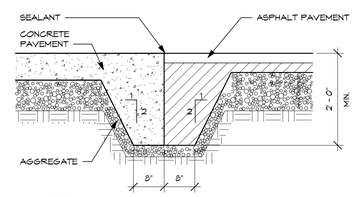
9 DETAIL @ DUMPSTER ENCLOSURE GATE
G1.2 G1.3 SCALE: 1/2" = 1'-0"



6 DETAIL
G1.3 SCALE: 1/2" = 1'-0"



3 DETAIL @FLAGPOLE BASE
G1.1 G1.2 SCALE: 3/4" = 1'-0"



NOTES:
- CONTRACTOR SHALL PROVIDE DOWNTURN ANYWHERE ASPHALT AND CONCRETE OR CONCRETE BASE PAVEMENT MEET.
- SEE DIVISION 07 SECTION 'JOINT SEALANTS' FOR HORIZONTAL TRAFFIC SEALANT TYPE.

4 DETAIL @ CONCRETE / ASPHALT TURNDOWN
G1.1 G1.2 SCALE: 3/4" = 1'-0"

C:\Users\Joe Malone\Documents\221_DF0305_ARCH_CENTRAL_r24_malonejoe1.rvt
2/17/2025 4:04:19 PM

STATE OF OHIO
JOSEPH
WEITHMAN
10152
REGISTERED ARCHITECTS

All reports, drawings, specifications, computer files, field data, notes and other documents and instruments prepared by Mull & Weithman Architects, Inc., as instruments of service shall remain the property of Mull & Weithman Architects, Inc. Mull & Weithman Architects, Inc. shall retain all common law, statutory and other reserved rights, including copyright © thereto.

Delaware Fire Station 305
680 Sunbury Road
Delaware, Ohio 43015

M&W
mull & weithman architects, inc.
4525 indianola avenue, columbus, ohio 43214
614-267-6660 614-267-6678 fax

issued for bidding
31 january 2025
commission no.22.11

G1.2

INSPIRED PEOPLE ▲ CREATIVE DESIGN ▲ TRANSFORMING COMMUNITIES

SUPPLEMENTAL PRIVATE DEVELOPMENT NOTES:

THE FOLLOWING NOTES APPLY TO THE PRIVATE PORTION OF THE DEVELOPMENT ONLY. ANY AND ALL DIRECTIVES, NOTES, REQUIREMENTS, ETC FROM THE CITY OF DELAWARE SHALL SUPERSEDE THE FOLLOWING PRIVATE DEVELOPMENT NOTES.

GENERAL NOTES

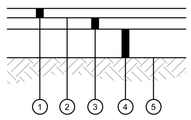
1. CONTRACTOR SHALL OBTAIN A PERMIT FOR ALL CONSTRUCTION ACTIVITIES IN ACCORDANCE WITH LOCAL, STATE, & FEDERAL REGULATIONS.
2. THE CONTRACTOR IS TO PERFORM ALL INSPECTIONS AS REQUIRED BY THE OHIO EPA FOR THE NATIONAL POLLUTANT DISCHARGE ELIMINATION SYSTEM (NPDES) PERMIT AND FURNISH OWNERS REPRESENTATIVE WITH WRITTEN REPORTS.
3. THE CONTRACTOR IS REQUIRED TO VISIT THE SITE AND FULLY INFORM THEMSELVES CONCERNING ALL CONDITIONS AFFECTING THE SCOPE OF THE WORK. FAILURE TO VISIT THE SITE SHALL NOT RELIEVE THEM FROM ANY RESPONSIBILITY IN THE PERFORMANCE OF THE CONTRACT.
4. NO ADDITIONAL COMPENSATION SHALL BE ALLOWED FOR EXPENSES INCURRED DUE TO SOIL CONDITIONS, GROUNDWATER, AND/OR ROCK EXCAVATION, ALL OF THESE ITEMS SHALL BE INCLUDED IN THE PRICE BID FOR THE PROJECT.
5. THE COST OF ALL DEWATERING REQUIRED FOR THE CONSTRUCTION OF THIS PROJECT SHALL BE INCLUDED IN THE PRICE BID FOR THE PROJECT.
6. THE DIRECT OR INDIRECT DISCHARGE OR PUMPING OF UNFILTERED SEDIMENT-LADEN WATER INTO THE STORM DRAINAGE SYSTEM OR WATERCOURSE IS ILLEGAL AND PROHIBITED.
7. ANY WELL, WELL POINT, PIT, OR OTHER DEVICE INSTALLED FOR THE PURPOSE OF LOWERING THE GROUND WATER TO FACILITATE CONSTRUCTION OF THIS PROJECT SHALL BE PROPERLY ABANDONED IN ACCORDANCE WITH THE PROVISIONS OF SECTION 3745-9-10 OF THE OHIO ADMINISTRATIVE CODE OR IN ACCORDANCE WITH THE PROVISIONS OF THIS PLAN AS DIRECTED BY THE DIRECTOR OF PUBLIC UTILITIES OR HIS REPRESENTATIVE.
8. ANY CONTRACTOR INSTALLING ANY WELL, WELL POINT, PIT, OR OTHER DEVICE USED FOR THE PURPOSE OF REMOVING GROUND WATER FROM AN AQUIFER SHALL COMPLETE AND FILE A WELL LOG AND DRILLING REPORT FORM WITH THE OHIO DEPARTMENT OF NATURAL RESOURCES (ODNR), DIVISION OF WATER, WITHIN 30 DAYS OF THE WELL COMPLETION IN ACCORDANCE WITH THE OHIO REVISED CODE SECTION 1521.01 AND 1521.05 IN ADDITION, ANY SUCH FACILITY IS COMPLETED IN ACCORDANCE WITH SECTION 1521.16 OF THE OHIO REVISED CODE. FOR COPIES OF THE NECESSARY WELL LOG, DRILLING REPORT, OR REGISTRATION FORMS, PLEASE CONTACT: OHIO DEPARTMENT OF NATURAL RESOURCES, 2045 MORSE ROAD, COLUMBUS, OHIO 43229, 614-265-6576.
9. THE CONTRACTOR SHALL BE SOLELY RESPONSIBLE TO THE ODNR FOR THE REGISTRY, MAINTENANCE AND ABANDONMENT OF ANY WITHDRAWAL DEVICE USED IN CONSTRUCTION OF THIS PROJECT.
10. ALL DIMENSIONS ARE TO THE EDGE OF PAVEMENT AND/OR FACE OF CURB, UNLESS OTHERWISE NOTED.
11. ALL SITE SIGNAGE, STRIPING COLOR AND WIDTH SHALL BE PER THE OHIO MANUAL OF UNIFORM TRAFFIC CONTROL DEVICES.
12. ALL EXISTING PAVEMENTS, WALKS, CURBS, ETC. SHALL BE FULL DEPTH SAWCUT BEFORE REMOVAL, IF, DURING CONSTRUCTION, THE PAVEMENT, WALKWAY, CURB, ETC. IS DAMAGED BEYOND THE ORIGINAL SAWCUT, THE DAMAGED AREA SHALL BE RECUT TO NEAT LINES AS DIRECTED BY THE ENGINEER. PAYMENT FOR SAWCUTTING SHALL BE INCLUDED IN THE PRICE BID FOR THE PROJECT.
13. THE CONTRACTOR SHALL FULL DEPTH SAWCUT EXISTING PAVEMENT TO PROVIDE A SMOOTH VERTICAL FULL DEPTH BUTT JOINT BETWEEN THE EXISTING PAVEMENT OR CURB AND THE PROPOSED PAVEMENT. CONTRACTOR SHALL LOCATE SOUND PAVEMENT EDGE AND CUT AND TRIM PAVEMENT TO A NEAT LINE. INCLUDE THE COST OF PAVEMENT REMOVAL AND DISPOSAL IN THE PRICE BID FOR THE PROJECT.

GRADING NOTES

1. CONTRACTOR TO REMOVE TREES AND CLEAR AREAS AS NECESSARY TO PERFORM ALL SITE WORK INCLUDING GRADING AND UTILITY WORK.
2. PROTECTION OF EXISTING TREES AND VEGETATION: PROTECT EXISTING TREES AND OTHER VEGETATION INDICATED TO REMAIN IN PLACE AGAINST UNNECESSARY CUTTING, BREAKING OR SKINNING OF ROOTS, SKINNING OR BRUISING OF BARK, SMOTHERING OF TREES BY STOCKPILING CONSTRUCTION MATERIALS OR EXCAVATED MATERIALS WITHIN DRIP LINE, EXCESS FOOT OR VEHICULAR TRAFFIC, OR PARKING OF VEHICLES WITHIN DRIP LINE. PROVIDE TEMPORARY GUARDS TO PROTECT TREES AND VEGETATION TO BE LEFT STANDING.
3. ALL ELEVATIONS SHOWN ARE FINISHED GRADE ELEVATIONS.
4. SITE BUILDING PAD EXCAVATION AND CONSTRUCTION TO BE PER GEOTECHNICAL ENGINEER'S RECOMMENDATIONS. BUILDING PAD PREPARATION SHALL BEGIN BY CLEARING & STRIPPING UNSUITABLE MATERIAL FROM PAD SITE. THEN PLACE & COMPACT BACKFILL MATERIAL AT GEOTECHNICAL ENGINEER'S AND ARCHITECT'S RECOMMENDATIONS. ALL BACKFILL MATERIAL MUST BE ACCEPTABLE TO THE GEOTECHNICAL ENGINEER.
5. ALL FILL UNDER PAVEMENT SHALL BE COMPACTED TO THE GEOTECHNICAL ENGINEER'S RECOMMENDATIONS.
6. THE CONTRACTOR IS RESPONSIBLE FOR BALANCING THE SITE EARTHWORK ON SITE. THE CONTRACTOR IS RESPONSIBLE FOR BURY/BORROW PITS AS NEEDED TO BALANCE THE SITE. GEOTECH AND ENGINEER MUST APPROVE AREAS PRIOR TO BURY/BORROW OPERATIONS. AS-BUILT OF BURY/BORROW PIT WILL BE REQUIRED AT COMPLETION OF CONTRACTOR WORK AND MUST BE SUBMITTED TO THE CONSTRUCTION MANAGER.
7. CONTRACTOR SHALL IMPLEMENT ALL SOIL AND EROSION CONTROL PRACTICES REQUIRED BY CITY OF DELAWARE AND THE OHIO EPA.
8. ALL GROUND SURFACE AREAS THAT HAVE BEEN EXPOSED OR LEFT BARE AS A RESULT OF CONSTRUCTION AND ARE TO FINAL GRADE AND ARE TO REMAIN SO, SHALL BE SEEDED AND MULCHED AS SOON AS PRACTICAL IN ACCORDANCE WITH THE PROJECT SPECIFICATIONS. IF NO SPECIFICATIONS ARE SUPPLIED, USE COC ITEM 659.
9. CONTRACTOR TO LAYOUT BUILDING BASED ON ARCHITECTURAL/FOUNDATION PLANS. SITE PLAN IS FOR CONCEPTUAL PURPOSES ONLY.

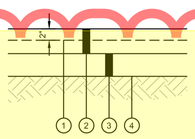
UTILITY NOTES

1. ALL DRAIN TILE AND STORM SEWERS DAMAGED, DISTURBED OR REMOVED AS A RESULT OF THE CONTRACTOR'S OPERATIONS SHALL BE REPLACED WITH THE SAME QUALITY PIPE OR BETTER, MAINTAINING THE SAME GRADIENT AS EXISTING. THE DRAIN TILE AND/OR STORM SEWER SHALL BE CONNECTED TO THE CURB SUBDRAIN, STORM SEWER SYSTEM OR OUTLETTED INTO THE ROADWAY DITCH AS APPLICABLE. REPLACED DRAIN TILE/STORM SEWER SHALL BE LAID ON COMPACTED BEDDING EQUAL IN DENSITY TO SURROUNDING STRATUM. REPLACEMENT SHALL BE DONE AT THE TIME OF THE BACKFILL OPERATION. COST OF THIS WORK TO BE INCLUDED IN THE PRICE BID FOR THE PROJECT.
2. ALL EXISTING UTILITIES KNOWN TO EXIST HAVE BEEN SHOWN ON THESE PLANS IN THEIR APPROXIMATE LOCATION. PRIOR TO THE BEGINNING OF CONSTRUCTION OR EARTH MOVING OPERATIONS, THE CONTRACTOR SHALL VERIFY THE LOCATION AND ELEVATION OF THE UTILITIES SHOWN. THE CONTRACTOR IS ALSO RESPONSIBLE FOR THE PROTECTION AND/OR RELOCATION OF ANY UTILITIES THAT MAY EXIST AND ARE NOT SHOWN.
3. THE CONTRACTOR SHALL BE RESPONSIBLE FOR COORDINATING THE RELOCATION AND/OR PROTECTION OF ANY UTILITIES AS REQUIRED BY THE PLAN WITH THE OWNER OF THE AFFECTED UTILITY.
4. UTILITY POLES WITHIN INFLUENCE OF THE UTILITY OPERATIONS SHALL BE REINFORCED BY THE UTILITY COMPANY PRIOR TO THESE CONSTRUCTION ACTIVITIES. NOTIFICATION OF THE UTILITY COMPANY PRIOR TO CONSTRUCTION SHALL BE THE RESPONSIBILITY OF THE CONTRACTOR.
5. COMPACTED FILLS ARE TO BE MADE TO A MINIMUM OF THREE FEET ABOVE THE CROWN OF ANY PROPOSED SEWER PRIOR TO CUTTING OF TRENCHES FOR PLACEMENT OF SAID SEWERS. ALL FILLS SHALL BE CONTROLLED, COMPACTED, AND INSPECTED BY AN APPROVED TESTING LABORATORY OR AN INSPECTOR FROM THE APPROPRIATE GOVERNMENTAL AGENCY.
6. CONTRACTOR TO REPLACE ANY PAVEMENT OR UTILITIES DAMAGED WHICH ARE NOT SPECIFIED TO BE REMOVED ON THESE PLANS.
7. ALL CATCH BASINS PLACED WITHIN THE PAVEMENT SHALL HAVE HEAVY DUTY FRAMES AND GRATES.
8. ALL CATCH BASIN GRATES LOCATED WITHIN PEDESTRIAN PATHWAYS OR SIDEWALK AREAS SHALL CONFORM TO ADA REQUIREMENTS.
9. ADJUST ALL EXISTING CASTINGS AND CLEANOUTS WITHIN PROJECT AREA TO GRADE AS REQUIRED.
10. ALL CATCH BASINS WITH DEPTH GREATER THAN 6' SHALL BE PROVIDED WITH STEPS. STEPS SHALL MEET THE REQUIREMENTS OF COC ITEM 604.
11. ALL STORM AND SANITARY SEWER MANHOLES WITH A DEPTH GREATER THAN 6' SHALL BE PROVIDED WITH STEPS. STEPS SHALL MEET THE REQUIREMENTS OF COC ITEM 604.
12. DISTANCES SHOWN FOR BOTH SANITARY AND STORM SEWER PIPES ARE MEASURED FROM CENTER OF STRUCTURE. THE CONTRACTOR IS RESPONSIBLE FOR ACTUAL FIELD CUT LENGTH. COORDINATES FOR STORM AND SANITARY STRUCTURES ARE SHOWN TO THE CENTER OF STRUCTURE, UNLESS OTHERWISE NOTED.
13. IMMEDIATELY AFTER PLACEMENT OF ANY CONDUITS, THE CONTRACTOR SHALL CONSTRUCT THE END TREATMENTS REQUIRED BY THE PLANS AT BOTH THE OUTLET AND INLET ENDS. THIS SHALL INCLUDE HEADWALLS, CONCRETE, RIP RAP, ROCK CHANNEL PROTECTION, SODDING, POURING BOTTOMS, MUDDING LIFT HOLES, ETC.
14. ALL PROPOSED STORM SEWERS, SURFACE OR OTHER DRAINAGE FACILITIES ARE TO BE PRIVATE AND MAINTAINED BY THE OWNER. EROSION CONTROL MEASURES MUST PROVIDE PROTECTION UNTIL COMPLETION OF THE PROJECT AND VEGETATIVE STABILIZATION.
15. THE CONTRACTOR IS TO CONSTRUCT CURBS, CATCH BASINS, DOWNSPOUTS, PIPING AND CONNECTIONS ETC. AS REQUIRED TO CONVEY THE ROOF AND PAVED SURFACE DRAINAGE TO THE DETENTION BASIN.
16. SITE CONTRACTOR SHALL PICK UP ALL UTILITIES, WITH THE EXCEPTION OF DOWNSPOUTS, 5' OUTSIDE BUILDING WALL. COORDINATE WITH CONSTRUCTION MANAGER.
17. ALL STORM STRUCTURES ARE THE CITY OF DELAWARE DETAILED STANDARD DRAWINGS OR CITY OF COLUMBUS STANDARD DRAWINGS.
18. STORM SEWER PIPE LABELED "STM" SHALL BE ONE OF THE FOLLOWING: PVC SDR-35 PER CMS ITEM 707.45, PVC PROFILE PIPE PER CMS ITEM 707.43, HIGH DENSITY POLYETHYLENE PER CMS ITEM 707.33, ALUMINIZED CORRUGATED METAL, CMS ITEM 707.01, 707.02, OR REINFORCED CONCRETE PIPE, CMS ITEM 706.02 CLASS IV. STORM SEWER PIPE LABELED "RCP" SHALL BE REINFORCED CONCRETE PIPE, CMS ITEM 706.02 CLASS IV. ALL STORM IS TO BE INSTALLED PER CMS ITEM 901. ALL STORM PIPE USED MUST HAVE A MANUFACTURER SPECIFIED FRICTION FACTOR OF 0.013 (N=0.013) OR LESS.
19. ALL CATCH BASINS IN THE PAVEMENT ARE TO HAVE 4, 4" PERFORATED UNDERDRAINS EXTENDING 10 LF FROM THE CATCH BASIN IN THE UPHILL DIRECTION AND CAPPED. ALL CATCH BASINS IN THE CURB ARE TO HAVE 2, 4" PERFORATED UNDERDRAINS EXTENDING 10 LF FROM THE CATCH BASIN IN THE UPHILL DIRECTION AND CAPPED.
20. FOR EXACT LOCATION OF DOWN SPOUTS & ROOF DRAINS, COORDINATE WITH CONSTRUCTION MANAGER. ALL ROOF DRAINS ARE TO BE 8" UNLESS OTHERWISE NOTED.
21. ALL YARD DRAINS SHALL BE ONE OF THE FOLLOWING: NYLOPLAST-ADS DRAIN BASIN, NDS DURACAST FABRICATED PVC CATCH BASIN, AGRI-DRAIN CATCH BASIN, OR APPROVED EQUAL.
22. ALL EXISTING INVERTS ALONG PROPOSED PIPE ALIGNMENTS SHALL BE VERIFIED BY THE CONTRACTOR PRIOR TO CONSTRUCTION OF THE SEWER.
23. ANY FIELD TILE CUT IN EXCAVATION WHICH DRAINS IN AN OFFSITE AREA MUST BE TIED INTO THE STORM DRAINAGE SYSTEM.
24. THE FLOW IN ALL SEWERS, DRAINS, FIELD TILES AND WATERCOURSES ENCOUNTERED SHALL BE MAINTAINED BY THE CONTRACTOR AT HIS OWN EXPENSE, AND WHENEVER SUCH WATERCOURSES AND DRAINS ARE DISTURBED OR DESTROYED DURING THE PROSECUTION OF THE WORK, THEY SHALL BE RESTORED BY THE CONTRACTOR AT HIS OWN EXPENSE TO A CONDITION SATISFACTORY TO THE ENGINEER.
25. SANITARY SEWER SHALL BE INSTALLED AT A MINIMUM DEPTH OF FOUR FEET (4') UNLESS OTHERWISE NOTED. A MINIMUM OF 18" CLEARANCE SHALL BE MAINTAINED AT ALL WATERLINE CROSSINGS.
26. SANITARY SEWER IS TO BE BEDDED WITH CLEAN GRANULAR MATERIAL-AGGREGATES NOT TO BE LARGER THAN 3/4" AND NOT SMALLER THAN NO. 8 SIEVE, FREE OF SILT AND FINES, AASHTO M43 SIZE #67, 7 OR 8. BEDDING TO BE MINIMUM OF 6" BELOW & 12" ABOVE THE PIPE.
27. ALL WATERLINE CROSSINGS SHALL MAINTAIN A VERTICAL SEPARATION OF 18" MINIMUM. SANITARY SEWER SHALL BE LOCATED A MINIMUM OF 18" BELOW WATERLINE AT ALL CROSSINGS. WATERLINE SHALL BE LOCATED A MINIMUM OF 10' HORIZONTALLY FROM ANY SANITARY SEWER. ALL MEASUREMENTS SHALL BE TAKEN FROM OUTSIDE OF SEWER PIPE TO THE OUTSIDE OF WATERLINE PIPE. ONE FULL LENGTH OF WATERLINE PIPE SHALL BE LOCATED AT ALL CROSSINGS TO ENABLE BOTH JOINTS TO BE LOCATED AS FAR FROM SEWER AS POSSIBLE. ALL WATER SHALL HAVE A MINIMUM OF 4' OF COVER.



1. 2"COC ITEM 441 ASPHALT CONCRETE SURFACE COURSE, TYPE 1 (448), PG64-22
2. COC ITEM 407 TACK COAT, APPLY IF TIME BETWEEN ASPHALT LIFTS EXCEEDS 30 DAYS
3. 2" COC ITEM 441 ASPHALT CONCRETE INTERMEDIATE COURSE, TYPE 2, PG64-22
4. 8" COC ITEM 304 AGGREGATE BASE
5. SUBGRADE COMPACTION, REFERENCE COC ITEM 204 AND SOILS REPORT

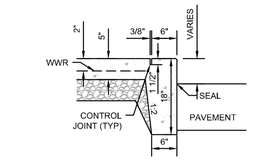
STANDARD DUTY ASPHALT PAVEMENT DETAIL (1/3) N.T.S.



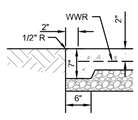
1. 6X6 W4XW4 WELDED WIRE REINFORCEMENT
2. 7" COC ITEM 452 NONREINFORCED PORTLAND CEMENT CONCRETE PAVEMENT
3. 6" COC ITEM 304 AGGREGATE BASE
4. SUBGRADE COMPACTION, REFERENCE COC ITEM 204 AND SOILS REPORT

HEAVY DUTY CONCRETE PAVEMENT DETAIL (2/3) N.T.S.

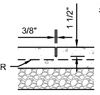
NOTE:
PAVEMENT DESIGN IS BASED ON A GEOTECHNICAL ENGINEER'S RECOMMENDATION PER A REPORT DATED MAY 8, 2024. THE KLEINGERS GROUP IS NOT RESPONSIBLE FOR PAVEMENT DESIGN.



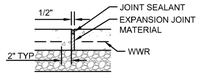
6" HIGH CURB AT PAVEMENT EDGE



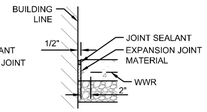
WALK EDGE AT LAWN AREA



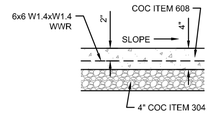
CONTROL JOINT



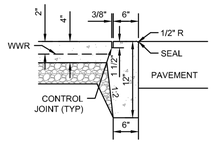
EXPANSION JOINT



WALK EDGE AT BUILDING LINE



WALK TYPICAL SECTION

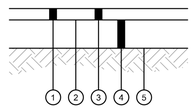


FLUSH CURB AT PAVEMENT EDGE

NOTES:

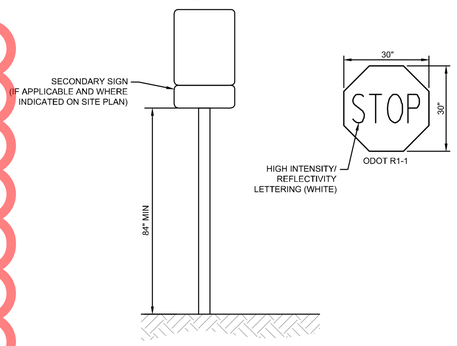
1. INSTALL EXPANSION JOINTS AT 30' OC MAXIMUM AND WHERE SLAB ABUTS STRUCTURES. WHERE NEW WALK ABUTS ADJOINING WALK, SAWCUT EXISTING WALK TO NEAREST JOINT AND INSTALL EXPANSION JOINT. EXPANSION JOINTS SHALL BE 1/2" WIDE BY DEPTH OF SLAB. SEAL ALL EXPANSION JOINTS.
2. INSTALL CONTROL JOINTS AT 6' OC MAXIMUM. CONTROL JOINTS SHALL BE 3/8" WIDE BY 1 1/2" DEEP AND TOOLED, SAWED JOINTS ARE NOT PERMITTED.
3. WALK SHALL HAVE A MINIMUM CROSS SLOPE OF 1.00%, MAXIMUM CROSS SLOPE OF 1.56%.
4. WATER AND UTILITY BOXES IN THE WALK AREA SHALL BE ADJUSTED FLUSH WITH THE FINAL SURFACE.
5. REFER TO ARCHITECTURAL PLANS FOR ADDITIONAL DETAIL AT ALL BUILDING DOORS.
6. JOINTING PLANS MUST BE SUBMITTED TO OWNER FOR APPROVAL.

EXTERIOR CONCRETE SLAB WALK WITH FLUSH CURB DETAIL (3/3) N.T.S.



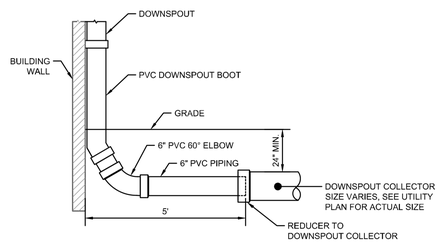
1. 1 1/2" COC ITEM 254 PAVEMENT PLANING, ASPHALT CONCRETE
2. COC ITEM 407 TACK COAT
3. 1 1/2" COC ITEM 441 ASPHALT CONCRETE SURFACE COURSE, TYPE 1 (448), PG64-22
4. EXISTING PAVEMENT SECTION
5. EXISTING SUBGRADE

ASPHALT PAVEMENT PLANING AND OVERLAY DETAIL (4/3) N.T.S.

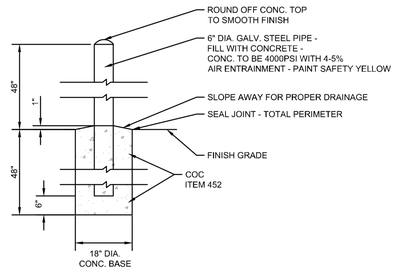


NOTE:
1. PROVIDE 4x4 TREATED SIGN POST SET IN EARTH IF OUTSIDE PAVEMENT EDGE OR IN CONCRETE TO A MINIMUM DEPTH OF 3'- 0" IF WITHIN PAVEMENT.
2. ATTACH SIGN TO BOTH SIDES WHERE INDICATED ON PLANS.

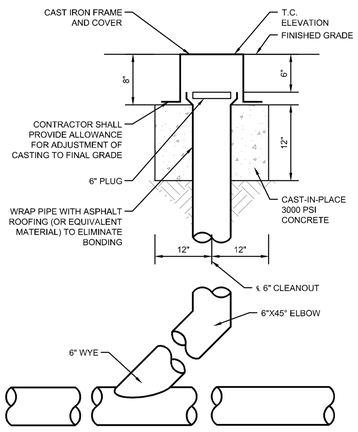
TYPICAL TRAFFIC SIGN DETAILS (5/3) N.T.S.



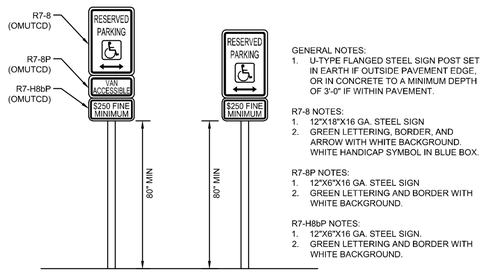
DOWNSPOUT BOOT DETAIL (6/3) N.T.S.



PIPE BOLLARD DETAIL (7/3) N.T.S.

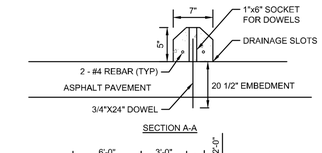


CLEANOUT DETAIL (8/3) N.T.S.

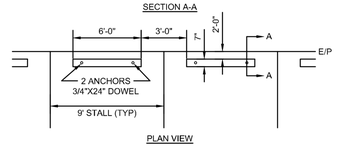


NOTE:
1. ONE ACCESSIBLE PARKING SPACE FOR EVERY SIX OR FRACTION THERE OF SHALL BE DESIGNATED AS "VAN ACCESSIBLE". LOCATION AS NOTED ON THE DRAWINGS.
2. ONE SIGN TO BE INSTALLED AT EACH ACCESSIBLE PARKING SPACE

ACCESSIBLE PARKING SIGN DETAIL (9/3) NTS

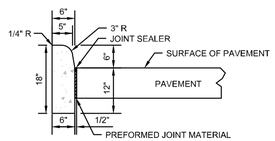


SECTION A-A

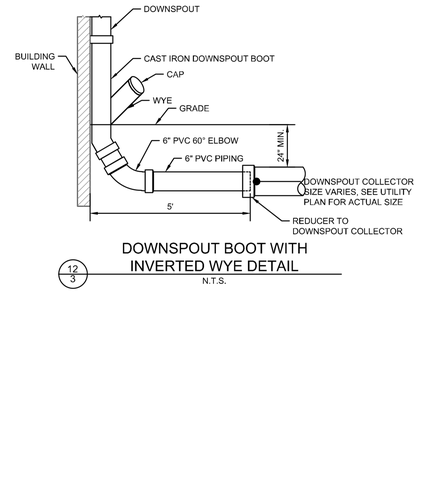


PLAN VIEW

PRECAST CONCRETE WHEEL STOP DETAIL (10/3) N.T.S.



BARRIER CURB DETAIL (11/3) N.T.S.



DOWNSPOUT BOOT WITH INVERTED WYE DETAIL (12/3) N.T.S.

THE KLEINGERS GROUP

CIVIL ENGINEERING
SURVEYING
LANDSCAPE ARCHITECTURE

www.kleingers.com
350 Worthington Rd
Suite H
Westerville, OH 43082
614.882.4311

SEAL:

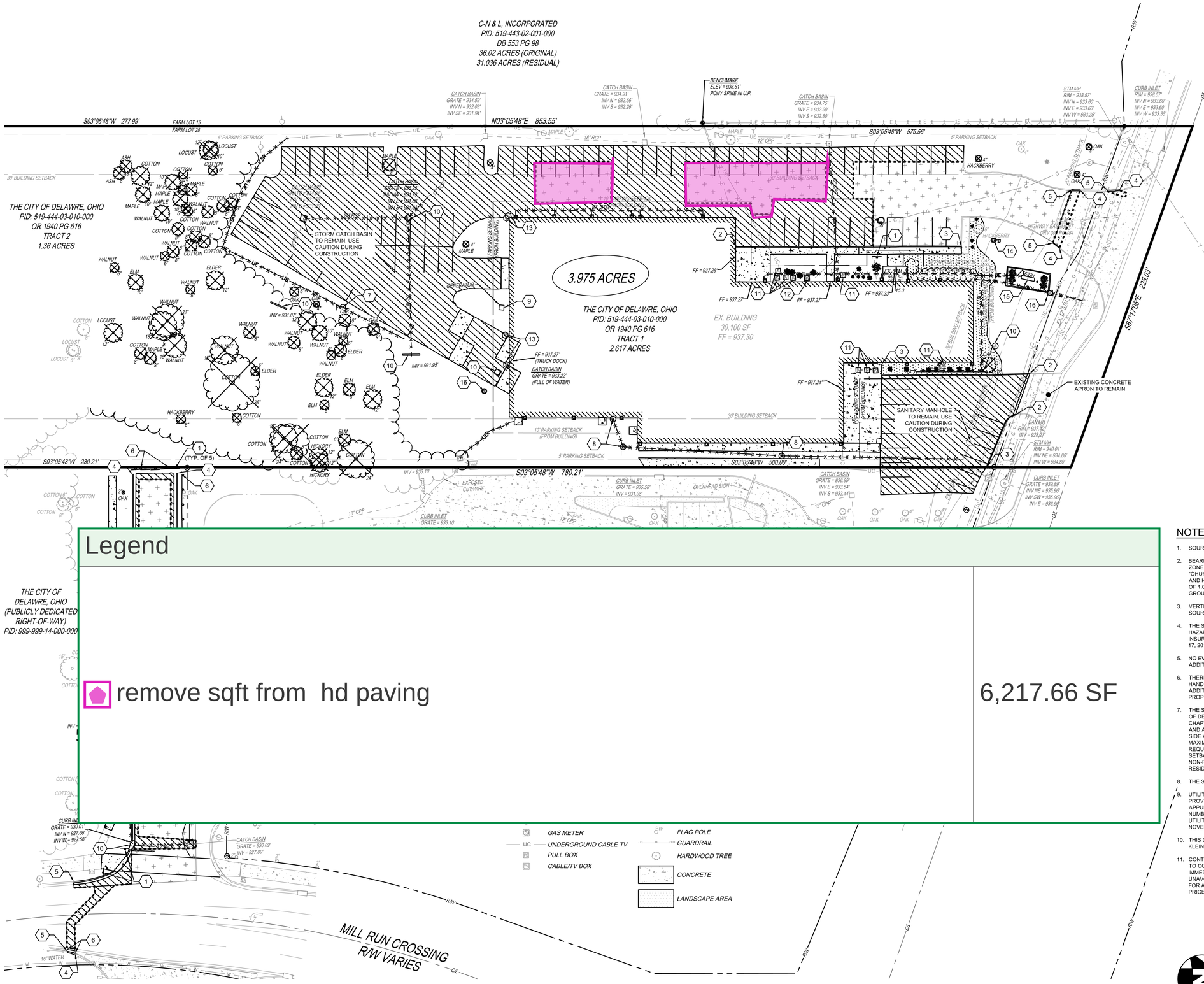
NO.	DATE	DESCRIPTION

DELAWARE FIRE STATION #305
680 SUNBURY ROAD
CITY OF DELAWARE
DELAWARE COUNTY, OH 43015

PROJECT NO:	220184.001
DATE:	02/13/2025
SCALE:	NOT TO SCALE
SHEET NAME:	GENERAL NOTES & DETAILS
SHEET NO.	3

H:\Columbus\Projects\220184\100\Dwg\Sheets\220184100DWG Sheet.dwg 2/13/2025 12:53:57 PM Jeffrey.Powell

INSPIRED PEOPLE ▲ CREATIVE DESIGN ▲ TRANSFORMING COMMUNITIES



Legend

remove sqft from hd paving	6,217.66 SF

GAS METER
UC UNDERGROUND CABLE TV
PULL BOX
CABLE/TV BOX
FLAG POLE
GUARDRAIL
HARDWOOD TREE
CONCRETE
LANDSCAPE AREA

DEMOLITION LEGEND

- REMOVE CONCRETE
- FULL DEPTH PAVEMENT & BASE REMOVAL
- SAWCUT LINE
- REMOVE TREE
- REMOVE EXISTING EXISTING UTILITY LINE
- REMOVE EXISTING STORM DOWNSPOUT
- REMOVE TREELINE
- REMOVE LANDSCAPING
- PAVEMENT PLANING AND RESURFACING, SEE DETAIL 4 ON SHEET 3

CODED NOTES

1. REMOVE/RELOCATE SIGN
2. BEGIN CURB REMOVAL
3. END CURB REMOVAL
4. BEGIN CURB & GUTTER REMOVAL
5. END CURB & GUTTER REMOVAL
6. REMOVE GUARDRAIL
7. LIGHT POLE TO BE REMOVED & SALVAGED
8. REMOVE EXISTING SANITARY CLEANOUT
9. REMOVE EXISTING GENERATOR, TANK, & FOUNDATION
10. REMOVE EXISTING STORM STRUCTURE
11. HVAC UNIT TO BE RELOCATED TO THE ROOF OF THE BUILDING
12. RELOCATE GAS METER, BY OTHERS
13. REMOVE BOLLARD
14. REMOVE FLAGPOLE & FOUNDATION
15. REMOVE SITE ENTRANCE SIGN & FOUNDATION
16. REMOVE EXISTING WATER STRUCTURE

NOTES

1. SOURCE DOCUMENTS AS NOTED.
2. BEARINGS ARE BASED ON THE STATE PLANE COORDINATE SYSTEM, OHIO NORTH ZONE (NAD83-2011) AS DETERMINED BY A GPS SURVEY UTILIZING CORS STATION "OHUN". THE PROJECT COORDINATES ARE BASED ON STATE PLANE COORDINATES AND HAVE BEEN SCALED TO GROUND BY USING A PROJECT ADJUSTMENT FACTOR OF 1.000010120 APPLIED AT BASE POINT N 229,500.00 E 1,817,750.00 . GRID AND GROUND COORDINATES ARE IDENTICAL AT THE BASE POINT.
3. VERTICAL DATUM IS NORTH AMERICAN VERTICAL DATUM 1988 (NAVD88), BASED ON SOURCE BENCHMARK CORS STATION "OHUN".
4. THE SUBJECTS PROPERTY IS LOCATED IN ZONE "X", AREA OF MINIMAL FLOOD HAZARD, AS DETERMINED BY GRAPHIC INTERPRETATION OF THE FLOOD INSURANCE RATE MAPS COMMUNITY NUMBER 39041C0116L EFFECTIVE FEBRUARY 17, 2016.
5. NO EVIDENCE OF CURRENT EARTHWORK, BUILDING CONSTRUCTION OR BUILDING ADDITION WAS OBSERVED AT THE TIME OF THE SURVEY.
6. THERE ARE 82 DESIGNATED REGULAR PARKING SPACES AND 1 DESIGNATED HANDICAP PARKING SPACES WITHIN THE SUBJECT PROPERTY. THERE ARE 4 ADDITIONAL REGULAR PARKING SPACES THAT ARE BENEFITING THE SUBJECT PROPERTY, BUT LIE OVER THE EASTERN PROPERTY LINE.
7. THE SUBJECT PROPERTY IS ZONED B-4 (GENERAL BUSINESS DISTRICT), PER CITY OF DELAWARE ZONING MAP. PER CITY OF DELAWARE CODE OF ORDINANCES CHAPTER 1143.04, SETBACK REQUIREMENTS INCLUDE A 50' FRONT YARD SETBACK, AND A 30' SIDE AND REAR SETBACK FROM A NON-RESIDENTIAL DISTRICT, OR A 50' SIDE AND REAR SETBACK FROM A RESIDENTIAL DISTRICT, PER CHAPTER 1143.05, MAXIMUM BUILDING HEIGHT IS 45'. PER CHAPTER 1143.06, PARKING SETBACK REQUIREMENTS INCLUDE 20' SETBACKS FROM STREET RIGHT-OF-WAY, 10' SETBACKS FROM THE MAIN BUILDING, 5' SIDE AND REAR SETBACKS FROM NON-RESIDENTIAL DISTRICTS, AND 20' SIDE AND REAR SETBACKS FROM RESIDENTIAL DISTRICTS. NO ZONING REPORT OR LETTER WAS PROVIDED.
8. THE SUBJECT PROPERTY HAS ACCESS TO SUNBURY ROAD (A PUBLIC ROADWAY).
9. UTILITIES SHOWN ARE BASED ON PHYSICAL MARKINGS, PLAN INFORMATION PROVIDED BY UTILITY OWNERS, AND LOCATIONS OF ABOVE-GROUND APPURTENANCES. OHIO 811 WAS CONTACTED ON NOVEMBER 17, 2022, TICKET NUMBERS A232102040, A232102091, A232102047, AND A232102099. SUPPLEMENTAL UTILITY MARKINGS WERE PROVIDED BY THE UNDERGROUND DETECTIVE ON NOVEMBER 28, 2022.
10. THIS DRAWING IS BASED ON AN ACTUAL FIELD SURVEY PERFORMED BY THE KLEINGERS GROUP IN DECEMBER, 2022 AND JANUARY, 2023.
11. CONTRACTOR SHALL CONFIRM DEPTH AND LOCATION OF EXISTING UTILITY PRIOR TO CONSTRUCTION AND REPORT ANY CONFLICTS TO THE DESIGN ENGINEER IMMEDIATELY. CONTRACTOR SHALL COORDINATE RESOLUTION OF ANY UNAVOIDABLE CONFLICT WITH THE APPROPRIATE UTILITY OWNER. CONTINGENCY FOR ANY LOWERING OR RELOCATION NEEDED SHALL BE ALLOTTED FOR IN THE PRICE BID FOR THE PROJECT.

OHIO811.org Before You Dig

THE KLEINGERS GROUP
CIVIL ENGINEERING
SURVEYING
LANDSCAPE ARCHITECTURE
www.kleingers.com
350 Worthington Rd
Suite H
Westerville, OH 43082
614.882.4311

SEAL:

NO.	DATE	DESCRIPTION

DELAWARE FIRE STATION #305

680 SUNBURY ROAD
CITY OF DELAWARE
DELAWARE COUNTY, OH 43015

PROJECT NO:	220184.001
DATE:	02/13/2025
SCALE:	0 20 40 80

SHEET NAME:

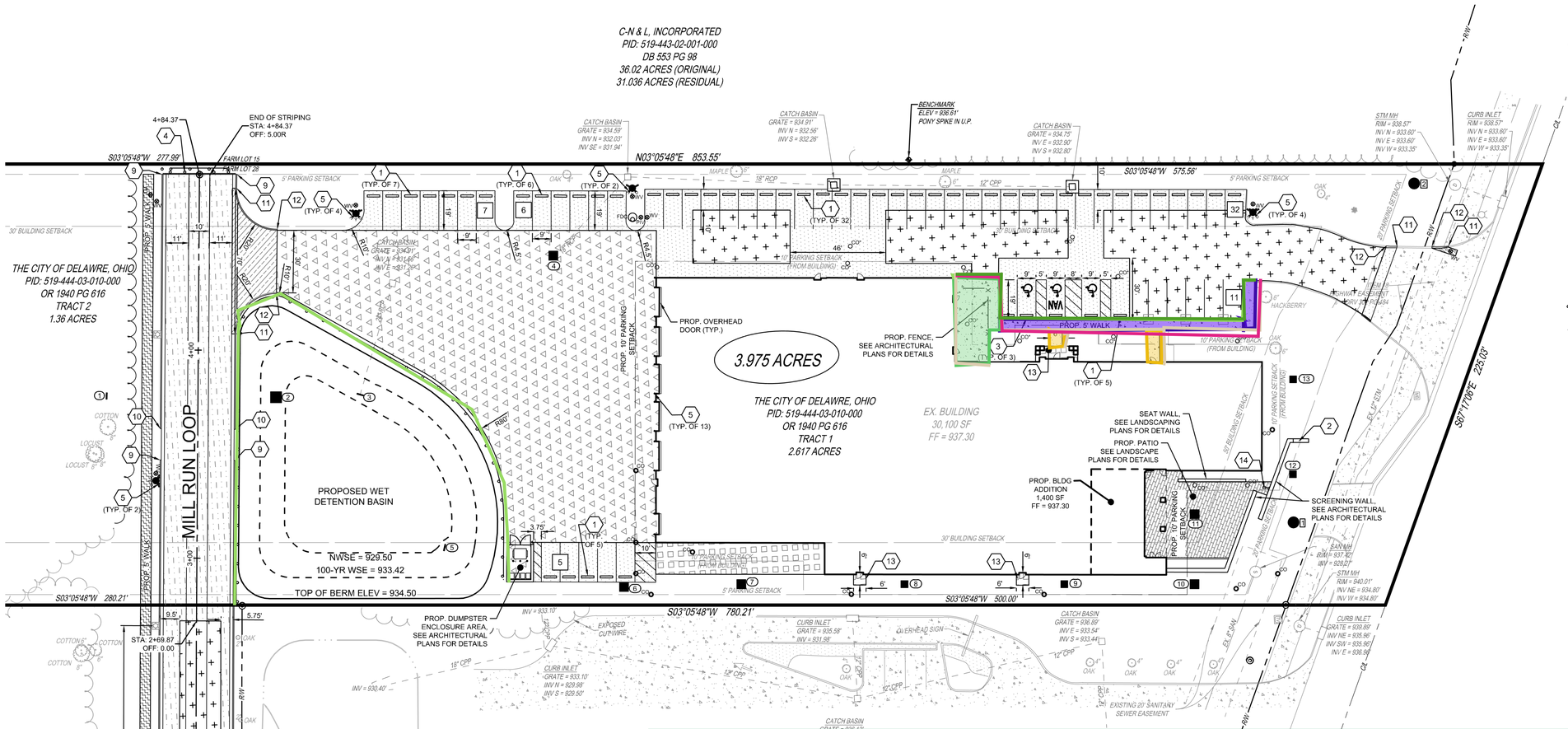
EXISTING CONDITIONS & DEMOLITION PLAN

SHEET NO.

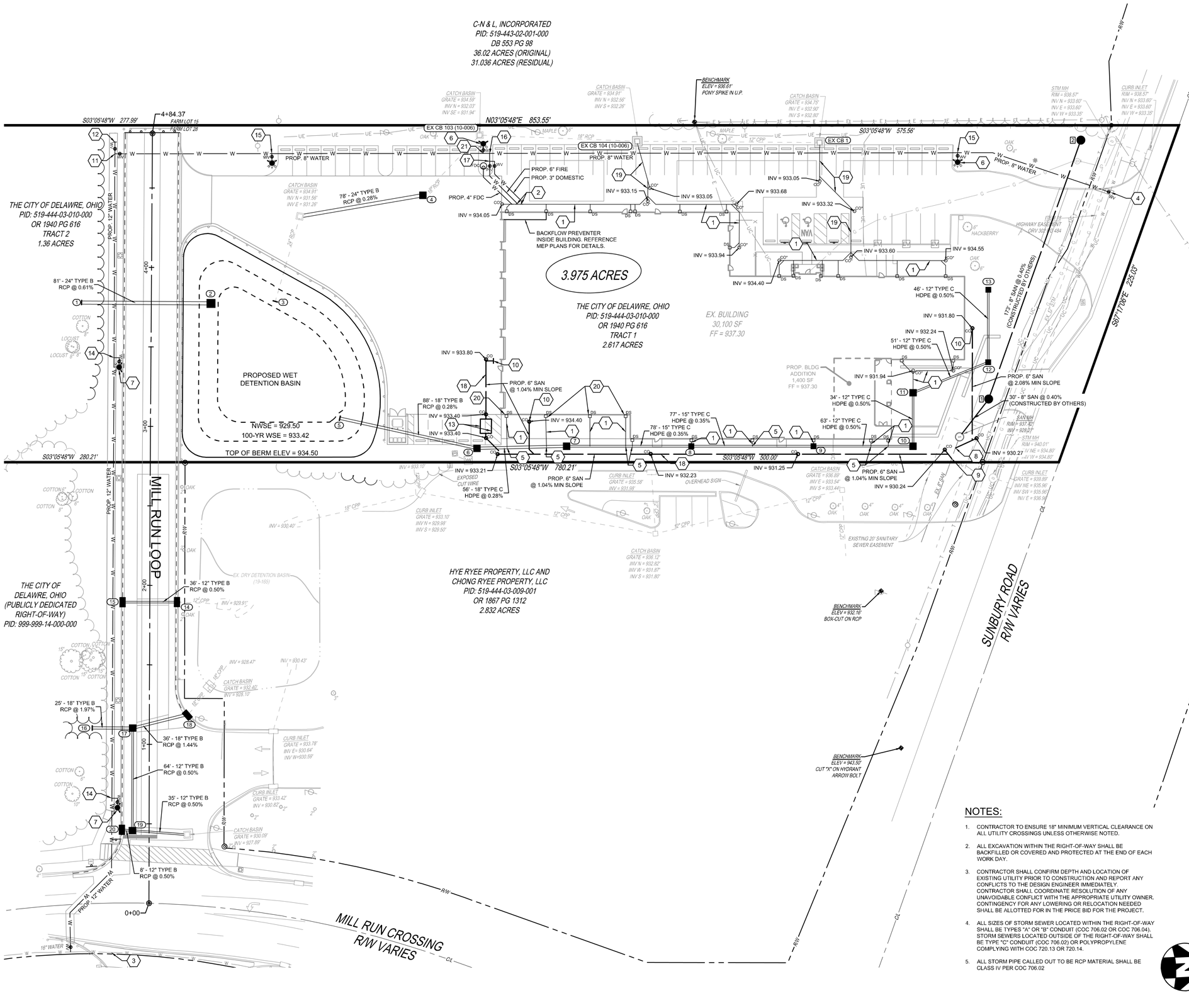
8

H:\Kleingers\Projects\220184\001_DWG_Sheets\220184D8001.dwg, 2/13/2025 12:25:07 PM, adewalt

INSPIRED PEOPLE ▲ CREATIVE DESIGN ▲ TRANSFORMING COMMUNITIES


C-N & L, INCORPORATED
PID: 519-443-02-001-000
DB 553 PG 98
36.02 ACRES (ORIGINAL)
31.036 ACRES (RESIDUAL)
THE CITY OF DELAWRE, OHIO
PID: 519-444-03-010-000
OR 1940 PG 616
TRACT 2
1.36 ACRES
3.975 ACRES
THE CITY OF DELAWARE, OHIO
PID: 519-444-03-010-000
OR 1940 PG 616
TRACT 1
2.617 ACRES
EX. BUILDING
30,100 SF
FF = 937.30
MILL RUN LOOP
PROPOSED WET DETENTION BASIN
NWSE = 929.50
100-YR WSE = 933.42
TOP OF BERM ELEV = 934.50
PROP. 5' WALK
PROP. OVERHEAD DOOR (TYP.)
PROP. FENCE, SEE ARCHITECTURAL PLANS FOR DETAILS
PROP. 5' WALK
PROP. 10' PARKING SETBACK
PROP. DUMPSTER ENCLOSURE AREA, SEE ARCHITECTURAL PLANS FOR DETAILS
SEAT WALL, SEE LANDSCAPING PLANS FOR DETAILS
PROP. PATIO SEE LANDSCAPE PLANS FOR DETAILS
PROP. BLDG ADDITION 1,400 SF FF = 937.30
SCREENING WALL, SEE ARCHITECTURAL PLANS FOR DETAILS
BENCHMARK
ELEV = 936.61'
PONY SPIKE IN U.P.
N03°05'48"E 853.55'
S03°05'48"W 277.99'
S03°05'48"W 575.56'
S87°17'08"E 225.03'
S03°05'48"W 280.21'
S03°05'48"W 780.21'
S03°05'48"W 500.00'
4+84.37
END OF STRIPING
STA: 4+84.37
OFF: 5.00R
FARM LOT 15
FARM LOT 28
STA: 2+69.87
OFF: 0.00
STOP LINE (21.5 L.F.)
STA: 0+41.55
BEGINING OF STRIPING
STA: 0+42.83
OFF: 5.00R
CROSSWALK (67 L.F.)
STA: 0+25.89 TO STA: 0+35.91
MILL RUN CROSSING
STA: 00+23.56
THE CITY OF DELAWARE, OHIO (PUBLICLY DEDICATED RIGHT-OF-WAY)
PID: 999-999-14-000-000
MILL RUN CROSSING
R/W VARIES
CATCH BASIN
GRATE = 934.59'
INV N = 932.03'
INV SE = 931.94'
CATCH BASIN
GRATE = 934.91'
INV N = 932.56'
INV S = 932.26'
CATCH BASIN
GRATE = 934.75'
INV E = 932.90'
INV S = 932.80'
STM MH
RIM = 938.57'
INV N = 933.60'
INV E = 933.60'
INV W = 933.35'
CURB INLET
RIM = 938.57'
INV N = 933.60'
INV E = 933.60'
INV W = 933.35'
CURB INLET
GRATE = 933.10'
INV N = 929.98'
INV S = 929.50'
CURB INLET
GRATE = 935.58'
INV = 931.98'
CATCH BASIN
GRATE = 936.89'
INV E = 933.54'
INV S = 933.44'
CURB INLET
GRATE = 939.89'
INV NE = 935.96'
INV SW = 935.96'
INV E = 936.96'
CATCH BASIN
GRATE = 933.78'
INV E = 930.04'
INV W = 930.89'
CATCH BASIN
GRATE = 933.40'
INV = 928.10'
CATCH BASIN
GRATE = 930.09'
INV = 927.89'
CURB INLET
GRATE = 933.42'
INV = 930.62'
EX. DRY DETENTION BASIN (19-165)
EXISTING 20' SANITARY SEWER EASEMENT
OVERHEAD SIGN
EXPOSED CUTWIRE
5' BUILDING SETBACK
30' BUILDING SETBACK
5' PARKING SETBACK
10' PARKING SETBACK (FROM BUILDING)
20' PARKING SETBACK (FROM BUILDING)
HACKBERRY
OAK
MAPLE
COTTON
LOCUST
18" RCP
12" CPP
15" CPP
24" CPP
EX 6" GAS LINE
EX 4" GAS LINE
EX 8" GAS LINE
EX 12" GAS LINE

INSPIRED PEOPLE ▲ CREATIVE DESIGN ▲ TRANSFORMING COMMUNITIES



UTILITY LEGEND

- STM — STORM SEWER PIPE
- STM — EXISTING STORM LINE
- 4" UNDERDRAIN, PER COD STD DWG RDWD-20.0
- CATCH BASIN
- EXISTING CATCH BASIN
- CURB INLET
- EXISTING CURB INLET
- EXISTING STORM MANHOLE
- YARD DRAIN
- HEADWALL
- DS — DOWNSPOUT
- CO — STORM CLEANOUT
- SAN — SANITARY SEWER PIPE
- SAN — EXISTING SANITARY SEWER PIPE
- PROPOSED SANITARY MANHOLE
- EXISTING SANITARY MANHOLE
- SANITARY SEWER CLEANOUT
- WAT W — WATERLINE PIPE
- WAT W — EXISTING WATERLINE PIPE
- FIRE HYDRANT
- EXISTING FIRE HYDRANT
- WV — WATER VALVE
- PRV — POST INDICATOR VALVE, SEE DETAIL 1 ON SHEET 5
- FDC — FIRE DEPARTMENT CONNECTION, SEE DETAIL 2 ON SHEET 5
- LIGHT POLE FOR REFERENCE ONLY
- EV — VEHICLE CHARGING PEDESTAL (FOR REFERENCE ONLY)

CODED NOTES

1. PROP. 8" STM @ 1% MIN SLOPE
2. REFER TO MEP PLANS FOR WATER LINE CONTINUATION
3. CONNECT TO EXISTING 16" WATER MAIN WITH 16"X12" TAPPING SLEEVE AND VALVE
4. CONNECT TO EXISTING 12" WATER MAIN WITH 12"X8" TAPPING SLEEVE AND VALVE
5. CONNECT TO STORM PIPE WITH INSERT-A-TEE OR APPROVED EQUAL
6. PROP. PRIVATE FIRE HYDRANT TYPE A PER COD STD DWG WTRD-9.0
7. PROP. PUBLIC FIRE HYDRANT TYPE B PER COD STD DWG WTRD-10.0
8. CONNECT 6" SAN SERVICE TO MAIN WITH WYE & RISER, INV = 928.23
9. CONNECT 6" SAN SERVICE TO MAIN WITH WYE & RISER, INV = 928.20
10. CONNECT BUILDING SAN SERVICE TO SITE SAN SERVICE. REFER TO MEP PLANS FOR DETAILS
11. PROP. 12"X12"X8" TEE W/ A 8" VALVE RESTRAINED TO THE NORTH
12. CAP PROP. 12" MAIN FOR FUTURE EXPANSION
13. PROP. OIL SEPARATOR, REFERENCE MEP PLANS FOR DETAILS
14. PROP. 12"X12"X6" TEE W/ A 6" VALVE RESTRAINED TO THE SOUTH
15. PROP. 8"X8"X6" TEE W/ A 6" VALVE RESTRAINED TO THE EAST
16. PROP. 8"X8"X6" TEE
17. PROP. 6"X6"X3" TEE
18. SANITARY SERVICE TO BE INSULATED WHERE LESS THAN 4' COVER, SEE DETAIL ON SHEET 11
19. PROP. 12" STM @ 1% MIN SLOPE
20. STORM DOWNSPOUT WITH INVERTED WYE, SEE DETAIL 12 ON SHEET 3
21. PROP. 8"X8"X6" TEE W/ A 6" VALVE RESTRAINED TO THE WEST

NOTES:

1. CONTRACTOR TO ENSURE 18" MINIMUM VERTICAL CLEARANCE ON ALL UTILITY CROSSINGS UNLESS OTHERWISE NOTED.
2. ALL EXCAVATION WITHIN THE RIGHT-OF-WAY SHALL BE BACKFILLED OR COVERED AND PROTECTED AT THE END OF EACH WORK DAY.
3. CONTRACTOR SHALL CONFIRM DEPTH AND LOCATION OF EXISTING UTILITY PRIOR TO CONSTRUCTION AND REPORT ANY CONFLICTS TO THE DESIGN ENGINEER IMMEDIATELY. CONTRACTOR SHALL COORDINATE RESOLUTION OF ANY UNAVOIDABLE CONFLICT WITH THE APPROPRIATE UTILITY OWNER. CONTINGENCY FOR ANY LOWERING OR RELOCATION NEEDED SHALL BE ALLOTTED FOR IN THE PRICE BID FOR THE PROJECT.
4. ALL SIZES OF STORM SEWER LOCATED WITHIN THE RIGHT-OF-WAY SHALL BE TYPES "A" OR "B" CONDUIT (COC 706.02 OR COC 706.04). STORM SEWERS LOCATED OUTSIDE OF THE RIGHT-OF-WAY SHALL BE TYPE "C" CONDUIT (COC 706.02) OR POLYPROPYLENE COMPLYING WITH COC 720.13 OR 720.14.
5. ALL STORM PIPE CALLED OUT TO BE RCP MATERIAL SHALL BE CLASS IV PER COC 706.02

OHIO811.org Before You Dig

THE KLEINGERS GROUP
CIVIL ENGINEERING
SURVEYING
LANDSCAPE ARCHITECTURE
www.kleingers.com
350 Worthington Rd
Suite H
Westerville, OH 43082
614.882.4311

SEAL:

NO. DATE DESCRIPTION

DELAWARE FIRE STATION #305

680 SUNBURY ROAD
CITY OF DELAWARE
DELAWARE COUNTY, OH 43015

PROJECT NO: 220184.001
DATE: 02/13/2025
SCALE: 0 15 30 60

SHEET NAME:

UTILITY PLAN

SHEET NO.

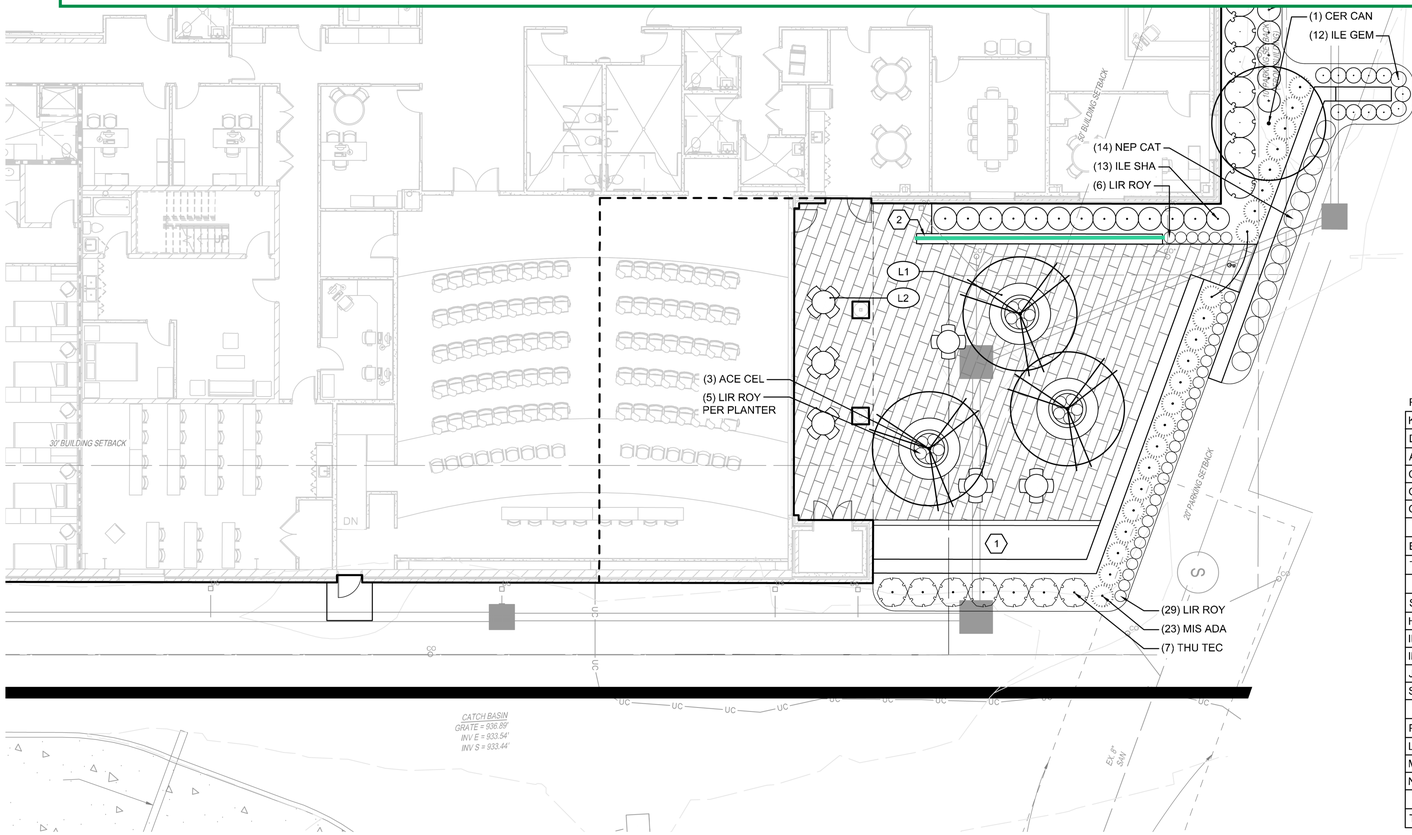
10

C:\Users\dschaefer\Documents\220184.001_DELAWARE FIRE STATION #305_dschaefer.rvt

INSPIRED PEOPLE ▲ CREATIVE DESIGN ▲ TRANSFORMING COMMUNITIES

Legend

Seat wall	33.02 LF



L1 PLANTER, TYP. — 3/26

L2 TABLE AND CHAIRS, TYP. — 4 - 5/26

1/26

PLANT MATERIAL

DECIDUOUS TREE, TYP. — 2/25

EVERGREEN TREE, TYP. — 3/25

SHRUBS, PERENNIALS & ORNAMENTAL GRASSES, TYP. — 4 - 7/25

EXISTING TREES TO REMAIN, PROTECT IN PLACE

PLANT SCHEDULE

KEY	BOTANICAL NAME	COMMON NAME	SIZE	ROOT	REMARKS
DECIDUOUS TREES:					
ACE CEL	ACER x FREEMANII 'CELEBRATION'	CELEBRATION MAPLE	3" CAL. MIN.	B&B	
CER CAN	CERCIS CANADENSIS	REDBUD	3" CAL. MIN.	B&B	
GIN PRI	GINKGO BILOBA 'PRINCETON SENTRY'	PRINCETON SENTRY GINKGO	3" CAL. MIN.	B&B	
QUE SHU	QUERCUS SHUMARDII	SHUMARD OAK	3" CAL. MIN.	B&B	
EVERGREEN TREES:					
THU TEC	THUJA OCCIDENTALIS 'TECHNY'	MISSION ARBORVITAE	6' HT. MIN.	B&B	PLANT 4' O.C.
SHRUBS:					
HYD JAN	HYDRANGEA PANICULATA 'JANE'	LITTLE LIME HYDRANGEA	24" HT. MIN.	CONT.	PLANT 4' O.C.
ILE GEM	ILEX GLABRA 'GEMBOX'	GEMBOX HOLLY	18" HT. MIN.	CONT.	PLANT 2' O.C.
ILE SHA	ILEX GLABRA 'SHAMROCK'	SHAMROCK HOLLY	24" HT. MIN.	CONT.	PLANT 3' O.C.
JUN SEA	JUNIPERUS x PFITZERIANA 'SEA GREEN'	SEA GREEN JUNIPER	36" HT. MIN.	B&B	PLANT 4' O.C.
SPI GOL	SPIRAEA x BUMALDA 'GOLDFLAME'	GOLDFLAME SPIREA	18" HT. MIN.	CONT.	PLANT 3' O.C.
PERENNIALS AND ORNAMENTAL GRASSES:					
LIR ROY	LIRIOPE MUSCARI 'ROYAL PURPLE'	ROYAL PURPLE LILY TURF	#1	CONT.	PLANT 18" O.C.
MIS ADA	MISCANTHUS SINENSIS 'ADAGIO'	ADAGIO MAIDEN GRASS	#2	CONT.	PLANT 36" O.C.
NEP CAT	NEPETA x FAASSENII 'CAT'S MEOW'	CAT'S MEOW CATMINT	#2	CONT.	PLANT 30" O.C.
TURFGRASS SEED: SEE SPECIFICATIONS					

OHIO811.org Before You Dig

THE KLEINGERS GROUP
CIVIL ENGINEERING
SURVEYING
LANDSCAPE ARCHITECTURE
www.kleingers.com
350 Worthington Rd
Suite H
Westerville, OH 43082
614.882.4311

SEAL:

NO. DATE DESCRIPTION

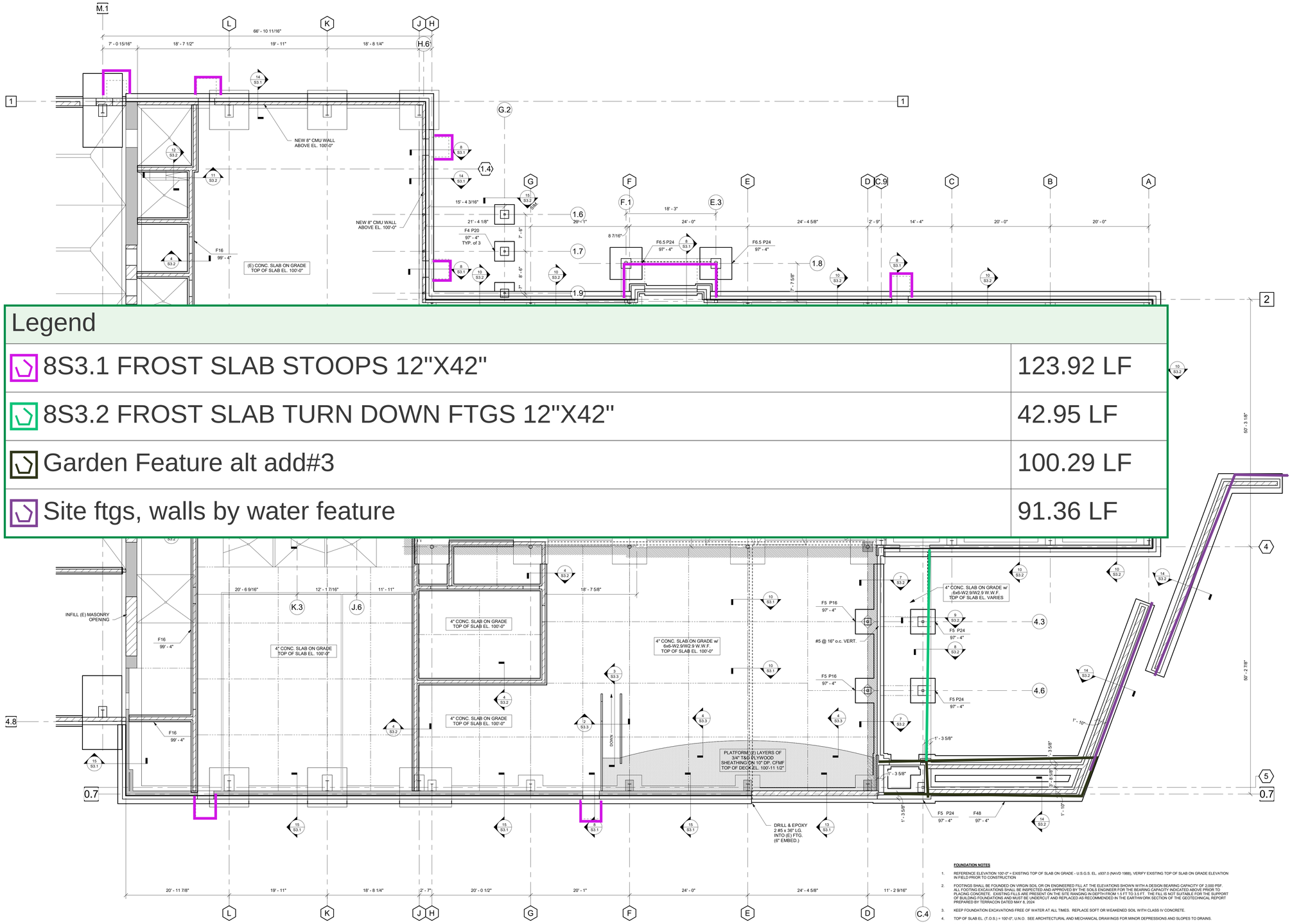
DELAWARE FIRE STATION #305
680 SUNBURY ROAD
CITY OF DELAWARE
DELAWARE COUNTY, OH 43015

PROJECT NO: 220184.001
DATE: 02/13/2025
SCALE: 0 5 10 20

SHEET NAME:
PLANTING PLAN ENLARGEMENT

SHEET NO.
24

saved by: Matt.Ziff 2025-02-13 12:02:21 PM, plot: 02/13/2025 12:02:21 PM, C:\Users\matt.ziff\Desktop\Delaware Fire Station #305_R24_mziff.rvt



Legend	
8S3.1 FROST SLAB STOOPS 12"X42"	123.92 LF
8S3.2 FROST SLAB TURN DOWN FTGS 12"X42"	42.95 LF
Garden Feature alt add#3	100.29 LF
Site ftgs, walls by water feature	91.36 LF

FOOTING SCHEDULE (2000 PSF SOIL)				
Mark	Size			Bottom Reinforcement
	Length	Width	Thickness	
F4	4' - 0"	4' - 0"	1' - 0"	4#5 E.W.
F5	5' - 0"	5' - 0"	1' - 0"	5#5 E.W.
F10	10' - 0"	10' - 0"	1' - 8"	9#7 E.W.
F15x8	15' - 0"	8' - 0"	2' - 6"	#8 @ 12" o.c. E.W. TOP & BOTT.
F15x10	15' - 0"	10' - 0"	2' - 6"	#8 @ 12" o.c. E.W. TOP & BOTT.

CONTINUOUS FOOTING SCHEDULE			
Mark	Width	Thickness	Bottom Reinforcement
F16	1' - 4"	1' - 0"	2#4 CONT.
F20	1' - 8"	2' - 4"	2#5 CONT.
F24	2' - 0"	1' - 0"	2#5 CONT.
F26	2' - 2"	1' - 0"	2#5 CONT.
F36	3' - 0"	1' - 0"	3#5 CONT.
F48	4' - 0"	1' - 0"	4#5 CONT.
F78	6' - 6"	2' - 6"	7 #7 Cont. Top & Bott. w/ #4 Ties @ 6" o.c.

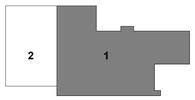
A FOUNDATION PLAN - EXIST. BLDG.

SCALE: 1/8" = 1'-0"

0' 1' 2' 4' 8'

FOUNDATION NOTES

1. REFERENCE ELEVATION 100'-0" = EXISTING TOP OF SLAB ON GRADE - U.S.G.S. EL. ±937.0 (NAVD 1988). VERIFY EXISTING TOP OF SLAB ON GRADE ELEVATION IN FIELD PRIOR TO CONSTRUCTION
2. FOOTINGS SHALL BE FOUNDED ON VIRGIN SOIL OR ON ENGINEERED FILL AT THE ELEVATIONS SHOWN WITH A DESIGN BEARING CAPACITY OF 2,000 PSF. ALL FOOTING EXCAVATIONS SHALL BE INSPECTED AND APPROVED BY THE SOILS ENGINEER FOR THE BEARING CAPACITY INDICATED ABOVE PRIOR TO PLACING CONCRETE. EXISTING FILLS ARE PRESENT ON THE SITE RANGING IN DEPTH FROM 1.5 FT TO 3.5 FT. THE FILL IS NOT SUITABLE FOR THE SUPPORT OF BUILDING FOUNDATIONS AND MUST BE UNDERCUT AND REPLACED AS RECOMMENDED IN THE EARTHWORK SECTION OF THE GEOTECHNICAL REPORT PREPARED BY TERRACON DATED MAY 8, 2024
3. KEEP FOUNDATION EXCAVATIONS FREE OF WATER AT ALL TIMES. REPLACE SOFT OR WEAKENED SOIL WITH CLASS IV CONCRETE.
4. TOP OF SLAB EL. (T.O.S.) = 100'-0", U.N.O. SEE ARCHITECTURAL AND MECHANICAL DRAWINGS FOR MINOR DEPRESSIONS AND SLOPES TO DRAINS.
5. FLOOR CONSTRUCTION:
   AT OFFICE AREAS: 4" THICK CONCRETE SLAB ON GRADE REINFORCED w/ SYNTHETIC FIBER REINFORCING.
   AT APPARATUS BAY: 6" THICK CONCRETE SLAB ON GRADE REINFORCED w/ (2) LAYERS OF 6x6-W2.9/2.9 WWF.
   AT PEMB ADDITION: 6" THICK CONCRETE SLAB ON GRADE REINFORCED w/ (1) LAYER OF 6x6-W2.9/W2.9 WWF.
   SEE DETAIL 1.1 / S3.1 FOR TYPICAL CONCRETE SLAB-ON-GRADE SAWN JOINT CONSTRUCTION.
   SEE DETAIL 1.2 / S3.1 FOR TYPICAL CONCRETE SLAB-ON-GRADE CONSTRUCTION JOINT AT OFFICE AREA.
   SEE DETAIL 6 / S3.1 FOR TYPICAL CONCRETE SLAB-ON-GRADE CONSTRUCTION JOINT AT APPARATUS BAY.
6. ELEVATIONS SHOWN AT FOOTINGS ARE TOP OF FOOTING ELEVATION (T.O.F.).
7. ALL EXTERIOR FOOTINGS TO BEAR MIN. 3'-0" BELOW ADJACENT GRADE. ADJUST BOTTOM OF FOOTING AS REQUIRED.
8. ALL EXTERIOR T.O.F. EL. = 97'-4", U.N.O.
9. ALL INTERIOR T.O.F. EL. = 99'-4", U.N.O.
10. TOP OF PIER ELEVATION (T.O.P.) EL. = 99'-4", U.N.O.
11. ▼ INDICATES FOOTING STEP, SEE DETAIL 1.3 / S3.1.
12. PROVIDE THICKENED SLAB PER DETAIL 1.4 / S3.1 UNDER ALL CMU WALLS WHICH ARE NOT ON FOOTINGS, AND UNDER STAIR POSTS AND STRINGERS. SEE ARCHITECTURAL DRAWINGS FOR LOCATION.
13. SEE 2 / S3.1 FOR TYPICAL FOOTING EXCAVATION CLEARANCE REQUIREMENTS.
14. SEE 3 / S3.1 FOR TYPICAL UNDERGROUND PIPE OR CONDUIT UNDER FOOTING CONSTRUCTION.
15. SEE 4 / S3.1 FOR TYPICAL UNDERGROUND PIPE OR CONDUIT THROUGH FOOTING CONSTRUCTION.
16. SEE 5 / S3.1 FOR TYPICAL ISOLATION JOINT CONSTRUCTION AROUND STEEL COLUMNS.
17. 8S532 INDICATES 8" CMU WALLS REINFORCED WITH #5 @ 32" o.c. VERTICAL REINFORCING STEEL. ALL CMU WALLS SHALL BE REINFORCED WITH A MINIMUM #5 @ 32" o.c. VERT., U.N.O. GROUT CORES 100% SOLID AT VERT. REINFORCING LOCATIONS. SEE DETAIL 1 / S0.1 AND 7 / S3.1 FOR ADDITIONAL INFORMATION.
18. SEE SHEET S0.0 FOR GENERAL STRUCTURAL NOTES.
19. SEE SHEET S0.1 FOR COLUMN SCHEDULE.
20. SEE SHEET S1.2 FOR CONCRETE PIER DETAILS.
21. SEE THIS SHEET FOR FOOTING AND ANCHOR BOLT SCHEDULES.
22. FIELD VERIFY ALL DIMENSIONS AND ELEVATIONS RELATED TO EXISTING BUILDING PRIOR TO START OF NEW CONSTRUCTION.



KEY PLAN

SCALE: N.T.S.

KORDA

KORDA: NEMETH ENGINEERING

WWW.KORDA.COM

DRAWN BY:	WRH
DESIGNED BY:	JPF
CHECKED BY:	NEB
PROJECT NUMBER:	2022-0121

STATE OF OHIO
JERRY P. FINLEY
#E-63623
REGISTERED
PROFESSIONAL ENGINEER

All reports, drawings, specifications, computer files, field data, notes and other documents and instruments prepared by Mull & Weithman Architects, Inc., as instruments of service shall remain the property of Mull & Weithman Architects, Inc. Mull & Weithman Architects, Inc. shall retain all common law, statutory and other reserved rights, including copyright © thereto.

New Construction for the City of Columbus:

Delaware Fire Station 305

680 Sunbury Road
Delaware, Ohio 43015

M&W
mull & weithman architects, inc.
4525 indianola avenue, columbus, ohio 43214
614-267-6660 614-267-6978 fax

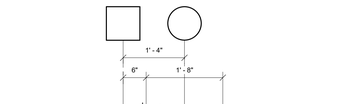
issued for bidding
31 january 2025
commission no.2211

S1.1

C:\Revit Local\R24\24-207-21 City of Delaware - Fire Station 305 - 2Rvt_mck.kamlovr.NHB6.rvt
2/17/2025 3:56:03 PM

Legend

8S3.1 FROST SLAB STOOPS 12"X...	2.88 LF



P2 PIER P2

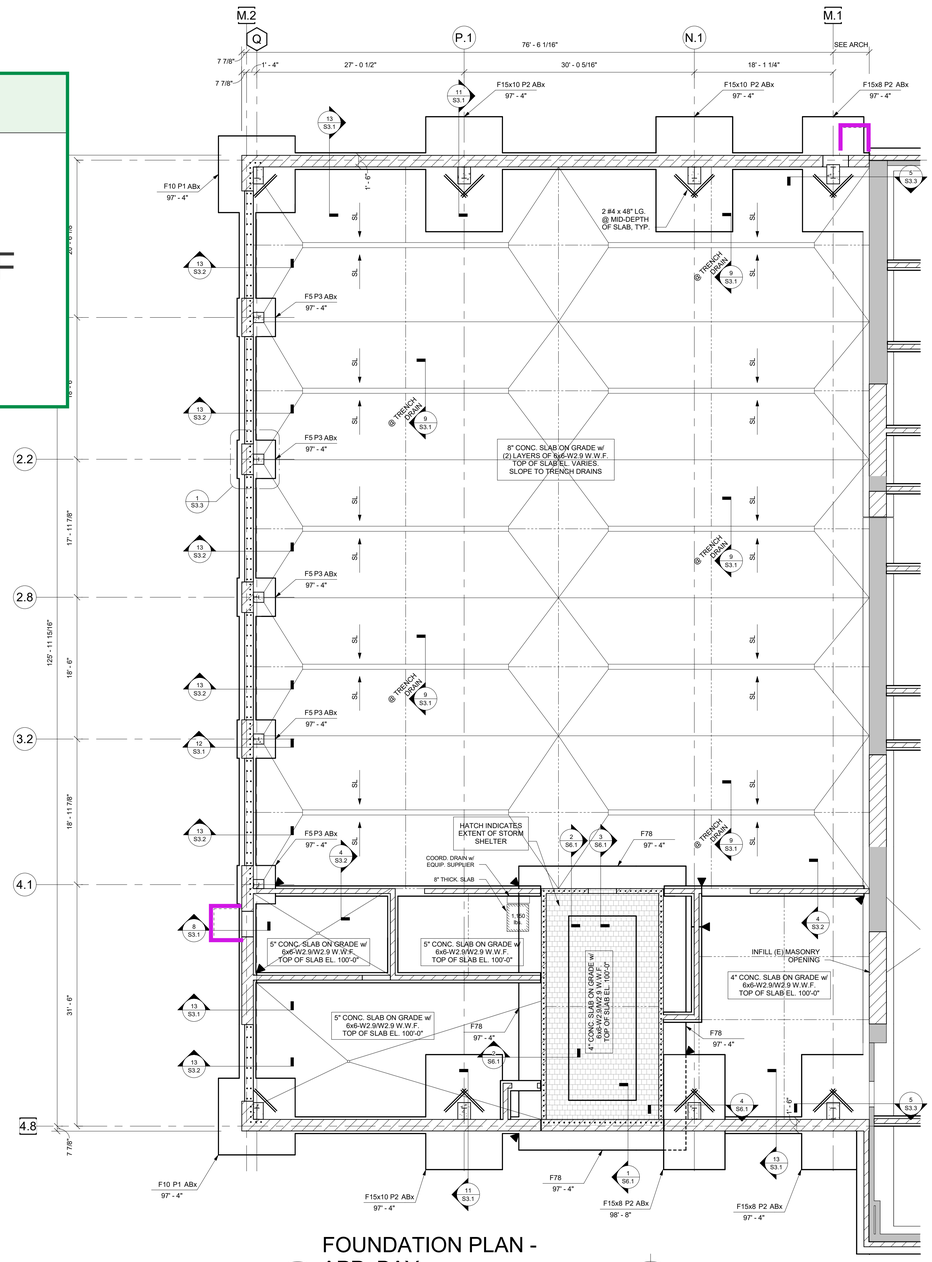
SCALE: 3/4" = 1'-0"

0' 3" 6" 1' 2'

P3 PIER P3

SCALE: 3/4" = 1'-0"

0' 3" 6" 1' 2'



A FOUNDATION PLAN - APP. BAY

SCALE: 1/8" = 1'-0"

0' 1'2' 4' 8'

FOUNDATION NOTES

1. REFERENCE ELEVATION 100'-0" = EXISTING TOP OF SLAB ON GRADE - U.S.G.S. EL. ±937.0 (NAVD 1988). VERIFY EXISTING TOP OF SLAB ON GRADE ELEVATION IN FIELD PRIOR TO CONSTRUCTION.
2. FOOTINGS SHALL BE FOUNDED ON VIRGIN SOIL OR ON ENGINEERED FILL AT THE ELEVATIONS SHOWN WITH A DESIGN BEARING CAPACITY OF 2,000 PSF. ALL FOOTING EXCAVATIONS SHALL BE INSPECTED AND APPROVED BY THE SOILS ENGINEER FOR THE BEARING CAPACITY INDICATED ABOVE PRIOR TO PLACING CONCRETE. EXISTING FILLS ARE PRESENT ON THE SITE RANGING IN DEPTH FROM 1.5 FT TO 3.5 FT. THE FILL IS NOT SUITABLE FOR THE SUPPORT OF BUILDING FOUNDATIONS AND MUST BE UNDERCUT AND REPLACED AS RECOMMENDED IN THE EARTHWORK SECTION OF THE GEOTECHNICAL REPORT PREPARED BY TERRACON DATED MAY 8, 2024
3. KEEP FOUNDATION EXCAVATIONS FREE OF WATER AT ALL TIMES. REPLACE SOFT OR WEAKENED SOIL WITH CLASS IV CONCRETE.
4. TOP OF SLAB EL. (T.O.S.) = 100'-0", U.N.O. SEE ARCHITECTURAL AND MECHANICAL DRAWINGS FOR MINOR DEPRESSIONS AND SLOPES TO DRAINS.
5. FLOOR CONSTRUCTION:
   AT OFFICE AREAS: 4" THICK CONCRETE SLAB ON GRADE REINFORCED w/ SYNTHETIC FIBER REINFORCING.
   AT APPARATUS BAY: 8" THICK CONCRETE SLAB ON GRADE REINFORCED w/ (2) LAYERS OF 6x6-W2.9/2.9 WWF.
   AT PEMB ADDITION: 6" THICK CONCRETE SLAB ON GRADE REINFORCED w/ (1) LAYER OF 6x6-W2.9/W2.9 WWF.
   SEE DETAIL 1.1 / S3.1 FOR TYPICAL CONCRETE SLAB-ON-GRADE SAWN JOINT CONSTRUCTION.
   SEE DETAIL 1.2 / S3.1 FOR TYPICAL CONCRETE SLAB-ON-GRADE CONSTRUCTION JOINT AT OFFICE AREA.
   SEE DETAIL 6 / S3.1 FOR TYPICAL CONCRETE SLAB-ON-GRADE CONSTRUCTION JOINT AT APPARATUS BAY.
6. ELEVATIONS SHOWN AT FOOTINGS ARE TOP OF FOOTING ELEVATION (T.O.F.).
7. ALL EXTERIOR FOOTINGS TO BEAR MIN. 3'-0" BELOW ADJACENT GRADE. ADJUST BOTTOM OF FOOTING AS REQUIRED.
8. ALL EXTERIOR T.O.F. EL. = 97'-4", U.N.O.
9. ALL INTERIOR T.O.F. EL. = 99'-4", U.N.O.
10. TOP OF PIER ELEVATION (T.O.P.) EL. = 100'-0", U.N.O. (AT APPARATUS BAY)
11. ▼ INDICATES FOOTING STEP, SEE DETAIL 1.3 / S3.1.
12. PROVIDE THICKENED SLAB PER DETAIL 1.4 / S3.1 UNDER ALL CMU WALLS WHICH ARE NOT ON FOOTINGS, AND UNDER STAIR POSTS AND STRINGERS. SEE ARCHITECTURAL DRAWINGS FOR LOCATION.
13. SEE 2 / S3.1 FOR TYPICAL FOOTING EXCAVATION CLEARANCE REQUIREMENTS.
14. SEE 3 / S3.1 FOR TYPICAL UNDERGROUND PIPE OR CONDUIT UNDER FOOTING CONSTRUCTION.
15. SEE 4 / S3.1 FOR TYPICAL UNDERGROUND PIPE OR CONDUIT THROUGH FOOTING CONSTRUCTION.
16. SEE 5 / S3.1 FOR TYPICAL ISOLATION JOINT CONSTRUCTION AROUND STEEL COLUMNS.
17. E5532 INDICATES 8" CMU WALLS REINFORCED WITH #5 @ 32" o.c. VERTICAL REINFORCING STEEL. ALL CMU WALLS SHALL BE REINFORCED WITH A MINIMUM #5 @ 32" o.c. VERT., U.N.O. GROUT CORES 100% SOLID AT VERT. REINFORCING LOCATIONS. SEE DETAIL 1 / S0.1 AND 7 / S3.1 FOR ADDITIONAL INFORMATION.
18. SEE SHEET S0.0 FOR GENERAL STRUCTURAL NOTES.
19. SEE THIS SHEET FOR CONCRETE PIER DETAILS APPLICABLE TO THE NEW PRE-ENGINEERED METAL BUILDING AT THE APPARATUS BAY.
20. SEE THIS SHEET FOR FOOTING AND ANCHOR BOLT SCHEDULES.
21. FIELD VERIFY ALL DIMENSIONS AND ELEVATIONS RELATED TO EXISTING BUILDING PRIOR TO START OF NEW CONSTRUCTION.

FOOTING SCHEDULE (2000 PSF SOIL)

Mark	Size			Bottom Reinforcement
	Length	Width	Thickness	
F4	4' - 0"	4' - 0"	1' - 0"	4#5 E.W.
F5	5' - 0"	5' - 0"	1' - 0"	5#5 E.W.
F10	10' - 0"	10' - 0"	1' - 8"	9#7 E.W.
F15x8	15' - 0"	8' - 0"	2' - 6"	#8 @ 12" o.c. E.W. TOP & BOTT.
F15x10	15' - 0"	10' - 0"	2' - 6"	#8 @ 12" o.c. E.W. TOP & BOTT.

CONTINUOUS FOOTING SCHEDULE

Mark	Width	Thickness	Bottom Reinforcement
F16	1' - 4"	1' - 0"	2#4 CONT.
F20	1' - 8"	2' - 4"	2#5 CONT.
F24	2' - 0"	1' - 0"	2#5 CONT.
F26	2' - 2"	1' - 0"	2#5 CONT.
F36	3' - 0"	1' - 0"	3#5 CONT.
F48	4' - 0"	1' - 0"	4#5 CONT.
F78	6' - 6"	2' - 6"	7 #7 Cont. Top & Bott. w/ #4 Ties @ 6" o.c.

STATE OF OHIO JERRY FINLEY #E-63623 REGISTERED PROFESSIONAL ENGINEER

All reports, drawings, specifications, computer files, field data, notes and other documents and instruments prepared by Mull & Weithman Architects, Inc., as instruments of service shall remain the property of Mull & Weithman Architects, Inc. Mull & Weithman Architects, Inc. shall retain all common law, statutory and other reserved rights, including copyright © thereto.

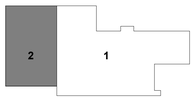
New Construction for the City of Columbus:

Delaware Fire Station 305

680 Sunbury Road
Delaware, Ohio 43015

M&W
mull & weithman architects, inc.
4525 indianola avenue, columbus, ohio 43214
614-267-6900 614-267-6978 fax

issued for bidding
31 january 2025
commission no.2.2.11



KEY PLAN
SCALE: N.T.S.

KORDA
KORDA: NEMETH ENGINEERING
WWW.KORDA.COM

DRAWN BY:	WRH
DESIGNED BY:	JPF
CHECKED BY:	NEB
PROJECT NUMBER:	2022-0121

S1.2

C:\Revit Local\R24-22\21 City of Delaware - Fire Station 305 - Shu_nick.bakhos@MTW.rvt
2/17/2025 3:55:04 PM

A MEZZANINE PLAN

SCALE: 1/8" = 1'-0"

0' 1' 2' 4' 8'

FLOOR FRAMING NOTES:

1. DESIGN FLOOR LIVE LOADS
   MEZZANINE AND EQUIPEMENT PLATFORM: 125 PSF
2. FLOOR CONSTRUCTION: 2 1/2" OF LIGHT WEIGHT CONCRETE ON 1 1/2" DP. x 18 GA. GALVANIZED COMPOSITE METAL FLOOR DECK (4" TOTAL SLAB THICKNESS) WITH 6x6-W2.1/W2.1 WWF.
3. TOP OF SLAB ELEVATION (T.O.S.) = 110'-0", U.N.O. SEE ARCHITECTURAL AND MECHANICAL DRAWINGS FOR MINOR SLOPES, C.I.P. CONCRETE CURBS, DRAINS, OPENINGS FOR PIPES AND DUCTS, ETC.
4. TOP OF STEEL ELEVATION (T.O.STL.) = 109'-8", UNLESS NOTED OTHERWISE.
5. SEE SHEET S0.0 FOR GENERAL STRUCTURAL NOTES.
6. SEE SHEET S0.1 FOR COLUMN SCHEDULE.
7. SEE DETAIL 4 / S4.1 FOR CONCRETE FLOOR SLAB FINISHING REQUIREMENTS AND BEAM/DEFLECTION DUE TO THE WEIGHT OF WET CONCRETE.
8. "[X]" — INDICATES NUMBER OF 3/4" DIAMETER HEADED SHEAR STUDS REQUIRED ON TOP FLANGE OF BEAM. SEE SECTION 3 / S4.1 FOR LAYOUT AND SPACING REQUIREMENTS OF SHEAR STUDS.
9. ▶ — INDICATES MOMENT CONNECTION. SEE SECTION 10 / S5.2 .
10. 35K — INDICATES BEAM REACTION FOR USE IN DESIGNING SHEAR CONNECTIONS.
11. 85S32 — INDICATES 8" CMU WALLS REINFORCED WITH #5 @ 32" o.c. VERTICAL REINFORCING STEEL. ALL CMU WALLS SHALL BE REINFORCED WITH A MINIMUM #5 @ 32" o.c. VERT., U.N.O. GROUT CORES 100% SOLID AT VERT. REINFORCING LOCATIONS. SEE DETAIL 1 / S0.1 AND 7 / S3.1 FOR ADDITIONAL INFORMATION.
12. ▨ — INDICATES FLOOR OPENING. DETERMINE THE EXACT SIZE AND LOCATION FROM THE ARCHITECTURAL AND MECHANICAL DRAWINGS AND THROUGH COORDINATION WITH THE APPROPIATE CONTRACTORS. PROVIDE A STEEL FRAME AT ALL FLOOR OPENINGS PER SECTION 5 / S4.1.
13. SEE 5 / S5.1 DETAIL FOR TYPICAL BEAM BEARING ON CMU WALL CONSTRUCTION.

KORDA

KORDA: NEMETH ENGINEERING
WWW.KORDA.COM

DRAWN BY:	WRH
DESIGNED BY:	JPF
CHECKED BY:	NEB
PROJECT NUMBER:	2022-0121

STATE OF OHIO
JERRY P. FINLEY
#E-63623
REGISTERED
PROFESSIONAL ENGINEER

All reports, drawings, specifications, computer files, field data, notes and other documents and instruments prepared by Mull & Weithman Architects, Inc., as instruments of service shall remain the property of Mull & Weithman Architects, Inc. Mull & Weithman Architects, Inc. shall retain all common law, statutory and other reserved rights, including copyright © thereto.

New Construction for the City of Columbus:

Delaware Fire Station 305

680 Sunbury Road
Delaware, Ohio 43015

mull & weithman architects, inc.
4525 indianola avenue, columbus, ohio 43214
614-267-6660
614-267-6978 fax

issued for bidding
31 january 2025
commission no.2211

S2.1

C:\Revit Local\R22\24-22\211 City of Delaware - Fire Station 305 - 3Rvy_mck.kamlnet\WBK.rvt
2/17/2025 3:56:04 PM